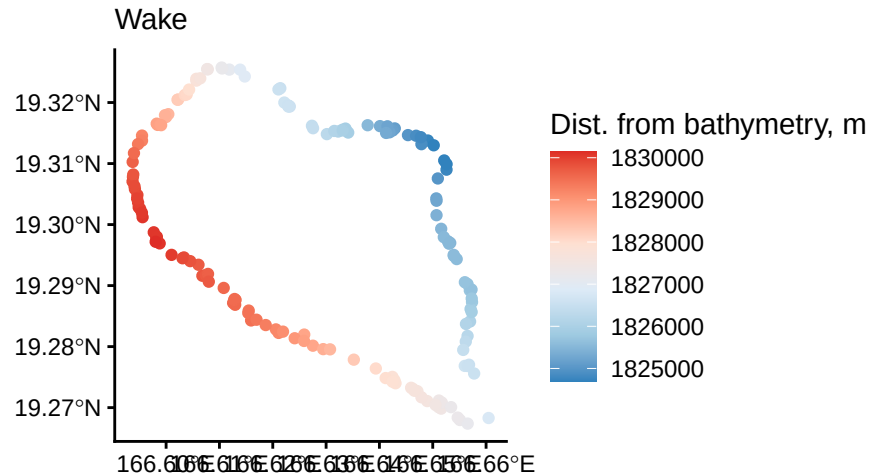
Wake
19.32°N
19.31°N
19.30°N
19.29°N
19.28°N
19.27°N
Dist. from bathymetry, m
1830000
1829000
1828000
1827000
1826000
1825000

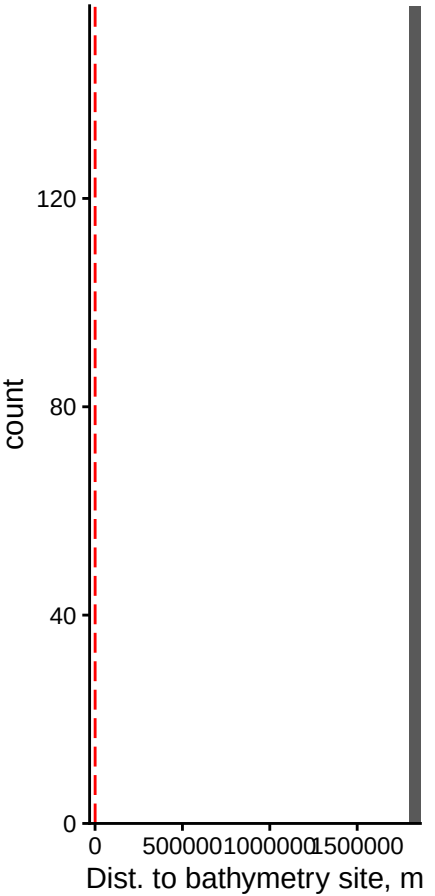
count
120
80
40
0
0
500000
1000000
1500000
Dist. to bathymetry site, m

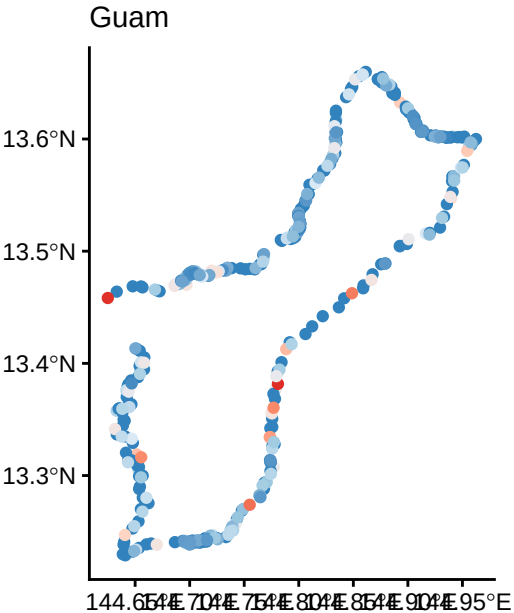
Guam
13.6°N
13.5°N
13.4°N
13.3°N
144.65°E
144.70°E
144.75°E
144.80°E
144.85°E
144.90°E
144.95°E

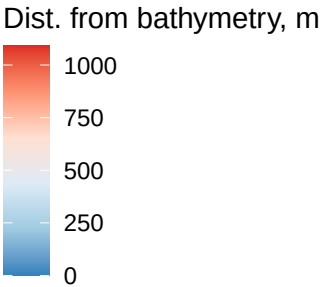
Dist. from bathymetry, m
1000
750
500
250
0

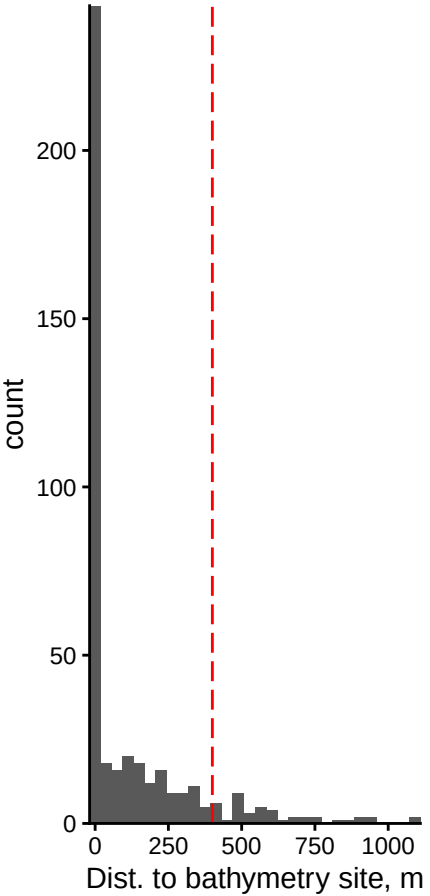
count
200
150
100
50
0
0
250
500
750
1000
Dist. to bathymetry site, m

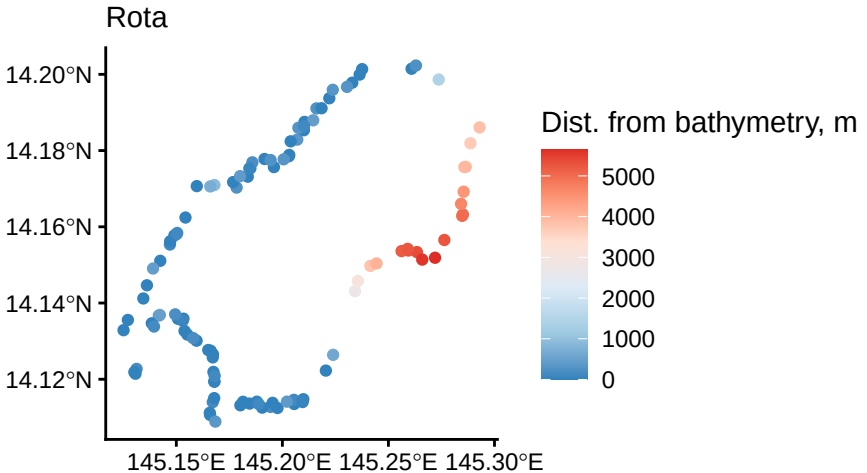
Rota
14.20°N
14.18°N
14.16°N
14.14°N
14.12°N
145.15°E
145.20°E
145.25°E
145.30°E
Dist. from bathymetry, m
5000
4000
3000
2000
1000
0

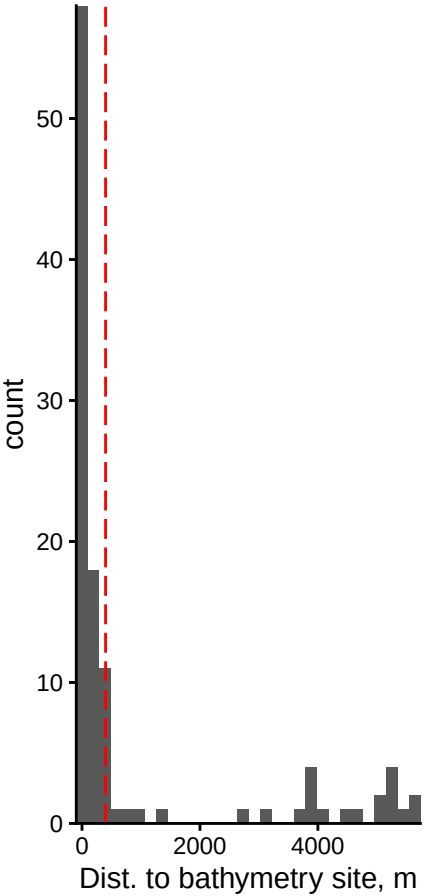
count
50
40
30
20
10
0
0
2000
4000
Dist. to bathymetry site, m

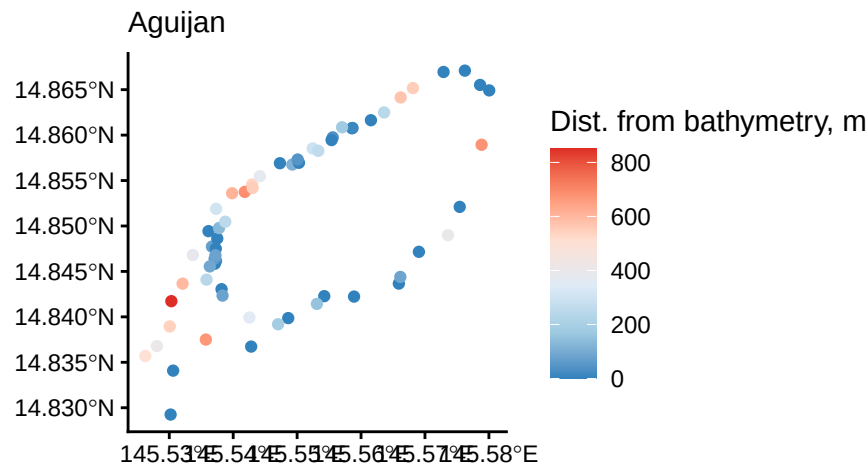
Aguijan
14.865°N
14.860°N
14.855°N
14.850°N
14.845°N
14.840°N
14.835°N
14.830°N
145.53°E
145.54°E
145.55°E
145.56°E
145.57°E
145.58°E
Dist. from bathymetry, m
800
600
400
200
0

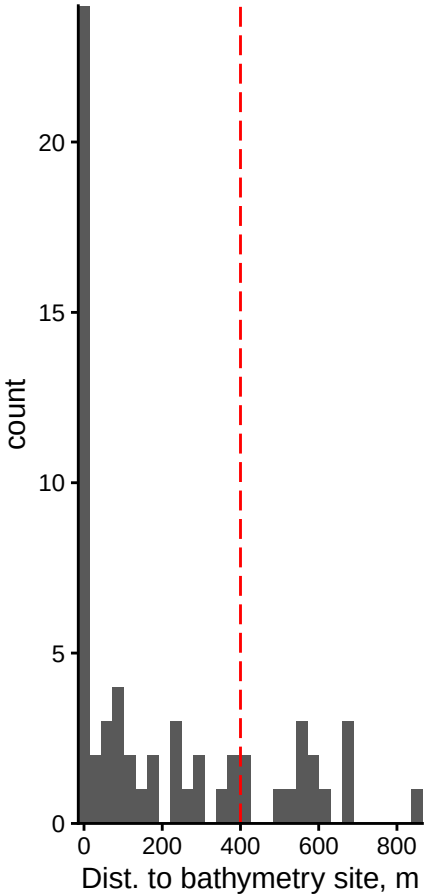
count
0
5
10
15
20
0
200
400
600
800
Dist. to bathymetry site, m

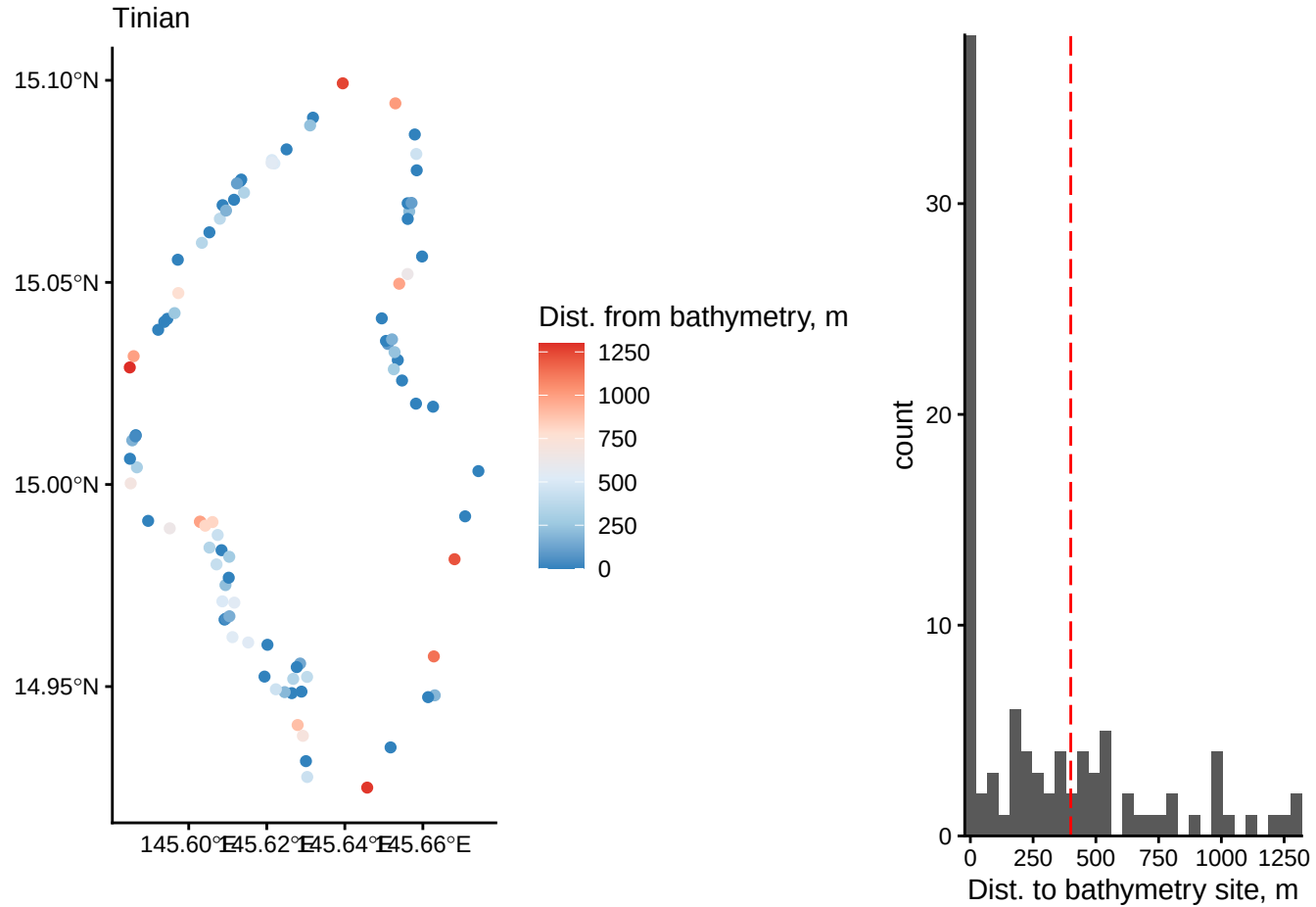
Tinian
15.10°N
15.05°N
15.00°N
14.95°N
145.60°E
145.62°E
145.64°E
145.66°E
Dist. from bathymetry, m
1250
1000
750
500
250
0
count
30
20
10
0
0
250
500
750
1000
1250
Dist. to bathymetry site, m

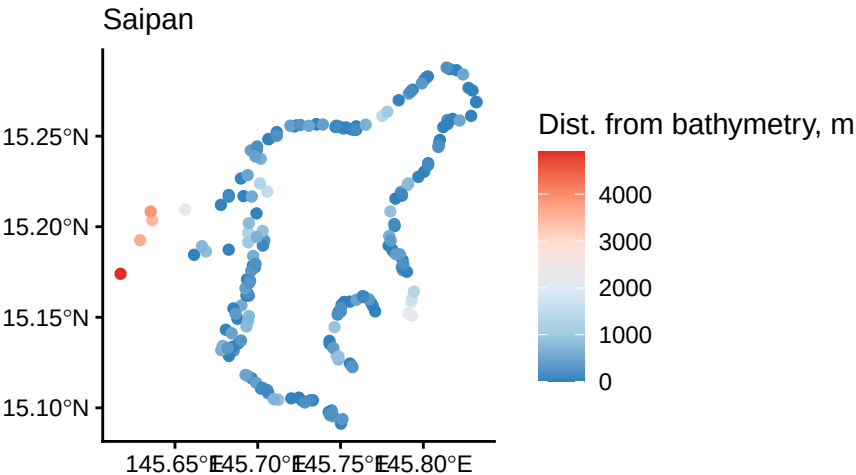
Saipan
15.25°N
15.20°N
15.15°N
15.10°N
145.65°E
145.70°E
145.75°E
145.80°E
Dist. from bathymetry, m
4000
3000
2000
1000
0

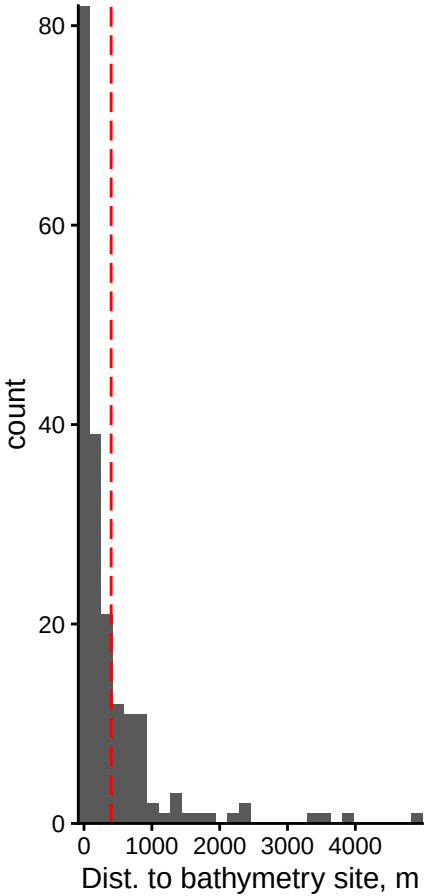
80
60
40
20
0
count
0
1000
2000
3000
4000
Dist. to bathymetry site, m

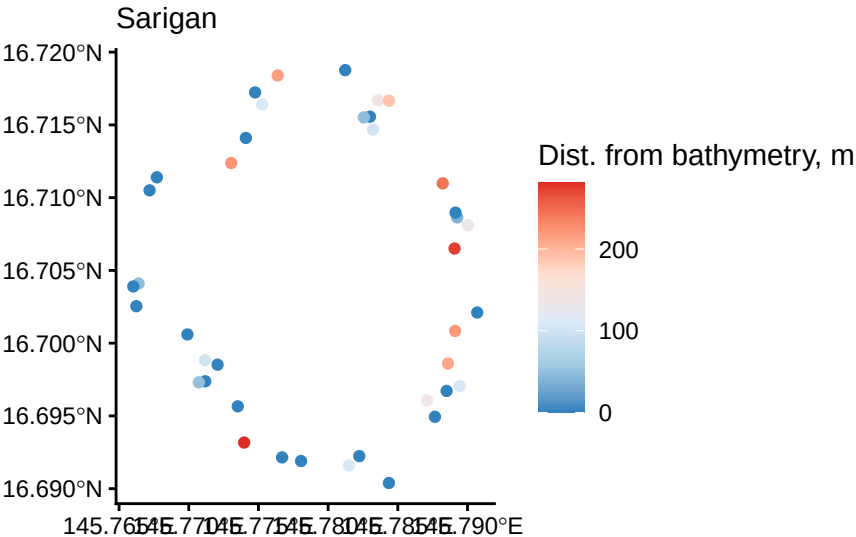
Sarigan
16.720°N
16.715°N
16.710°N
16.705°N
16.700°N
16.695°N
16.690°N
145.765°E
145.770°E
145.775°E
145.780°E
145.785°E
145.790°E
Dist. from bathymetry, m
200
100
0

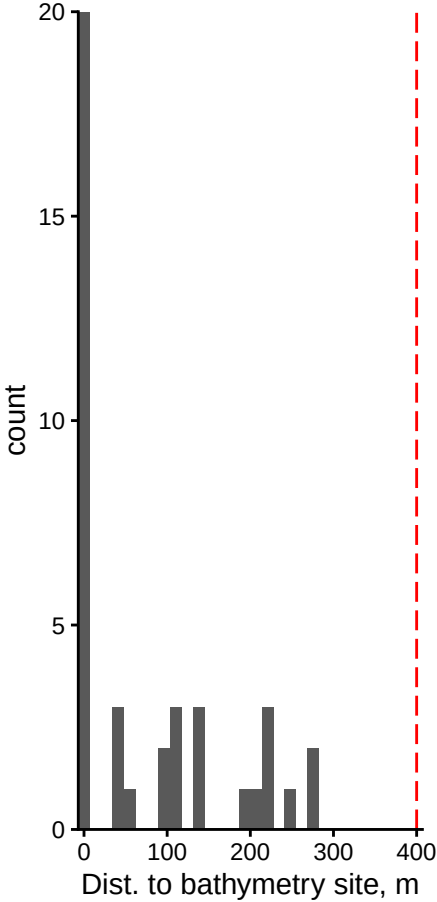
count
20
15
10
5
0
0
100
200
300
400
Dist. to bathymetry site, m

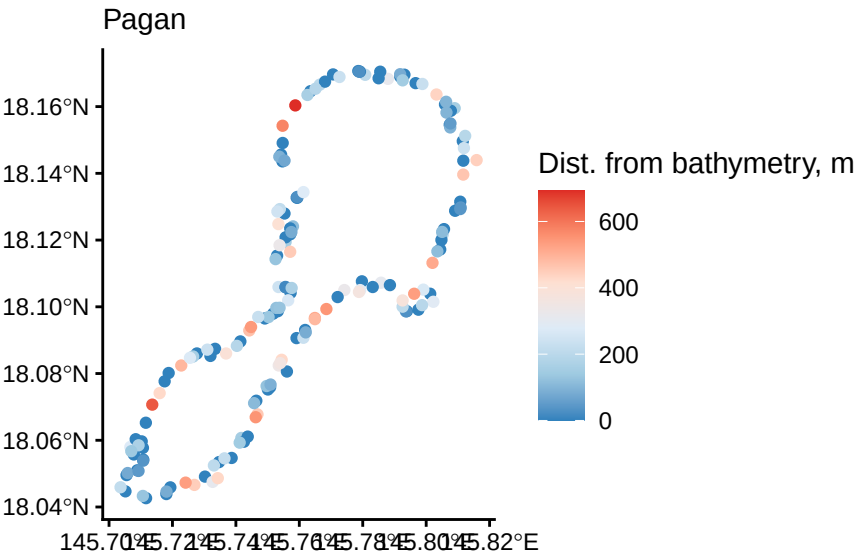
Pagan
18.16°N
18.14°N
18.12°N
18.10°N
18.08°N
18.06°N
18.04°N
145.70°E
145.72°E
145.74°E
145.76°E
145.78°E
145.80°E
145.82°E
Dist. from bathymetry, m
600
400
200
0

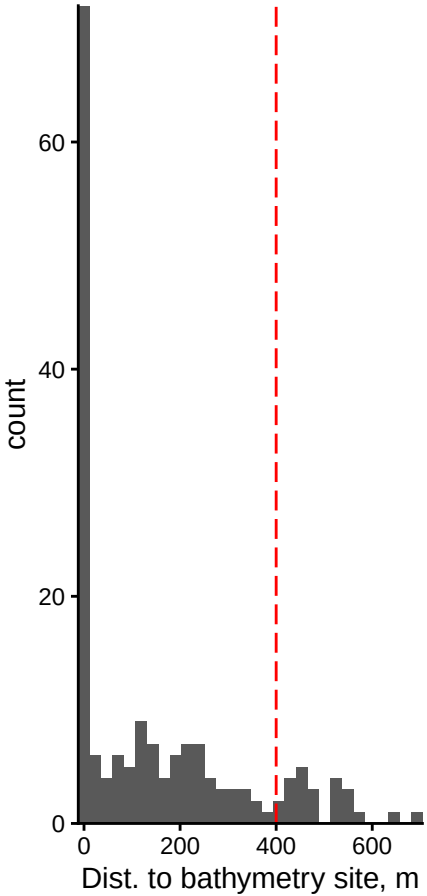
count
60
40
20
0
0
200
400
600
Dist. to bathymetry site, m

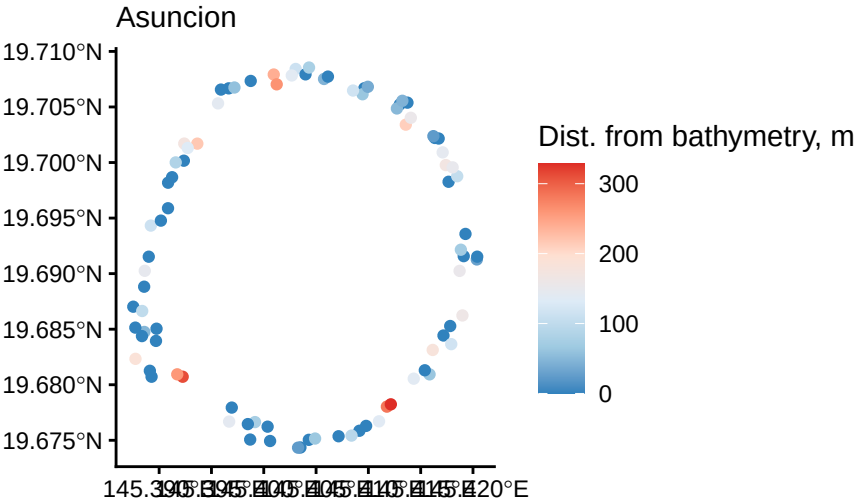
Asuncion
19.710°N
19.705°N
19.700°N
19.695°N
19.690°N
19.685°N
19.680°N
19.675°N
145.390°E
145.395°E
145.400°E
145.405°E
145.410°E
145.415°E
145.420°E
Dist. from bathymetry, m
300
200
100
0

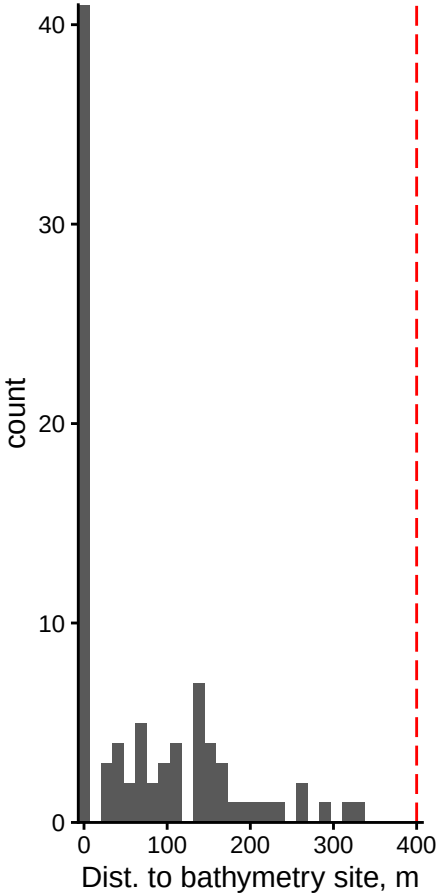
count
0
10
20
30
40
0
100
200
300
400
Dist. to bathymetry site, m

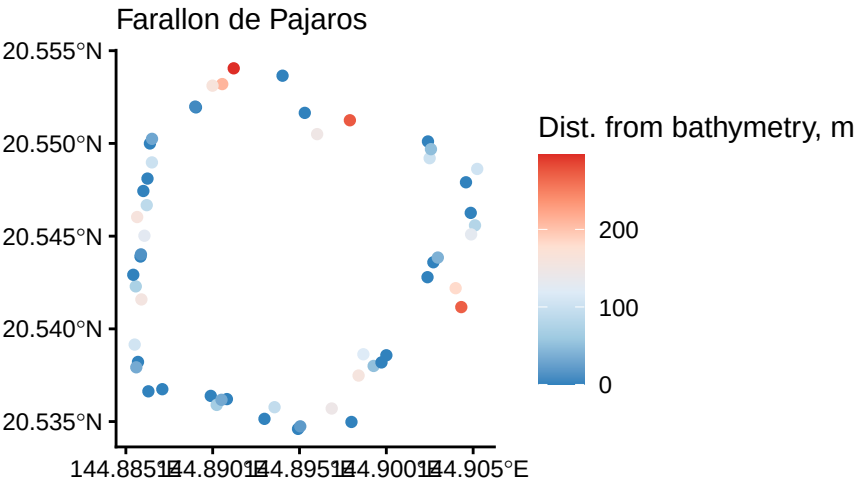
Farallon de Pajaros
20.555°N
20.550°N
20.545°N
20.540°N
20.535°N
144.885
144.890
144.895
144.900
144.905°E
Dist. from bathymetry, m
200
100
0

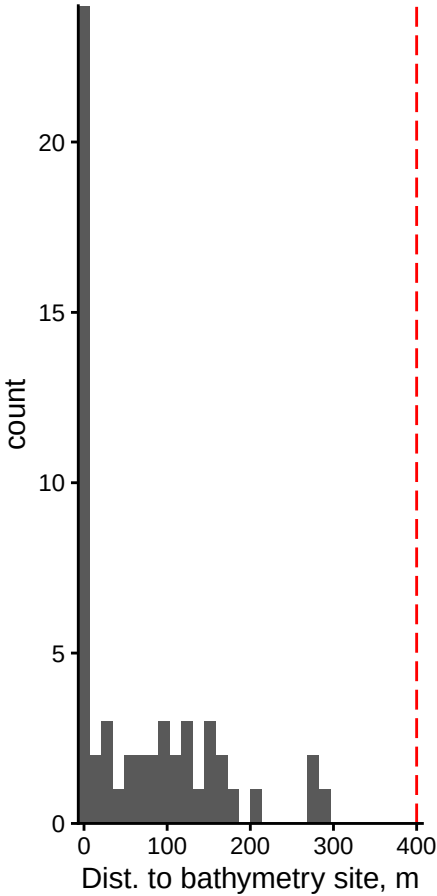
count
20
15
10
5
0
0
100
200
300
400
Dist. to bathymetry site, m

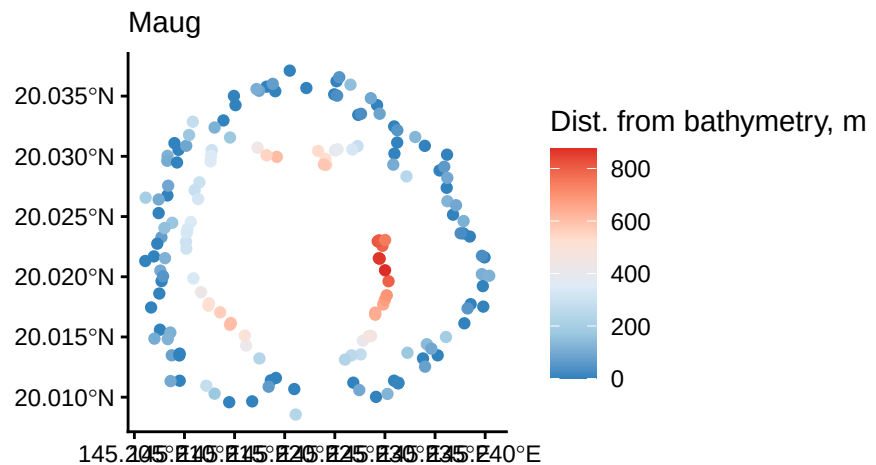
Maug
20.035°N
20.030°N
20.025°N
20.020°N
20.015°N
20.010°N
145.2°E
145.4°E
145.6°E
145.8°E
146°E
Dist. from bathymetry, m
800
600
400
200
0

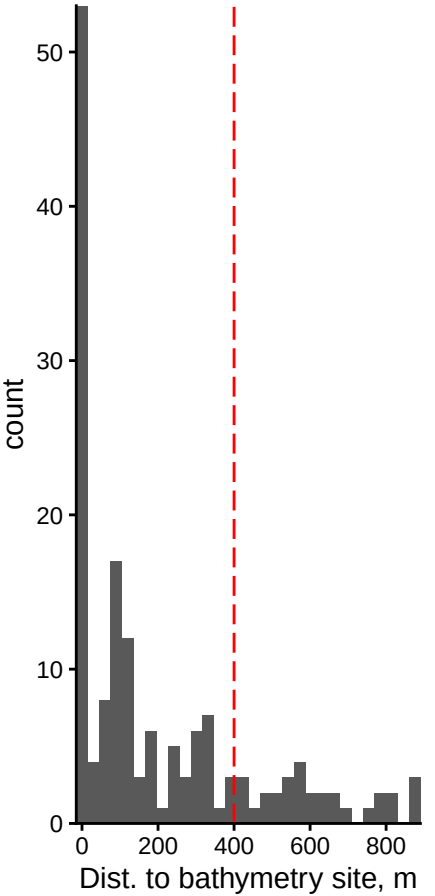
count
0
10
20
30
40
50
0
200
400
600
800
Dist. to bathymetry site, m

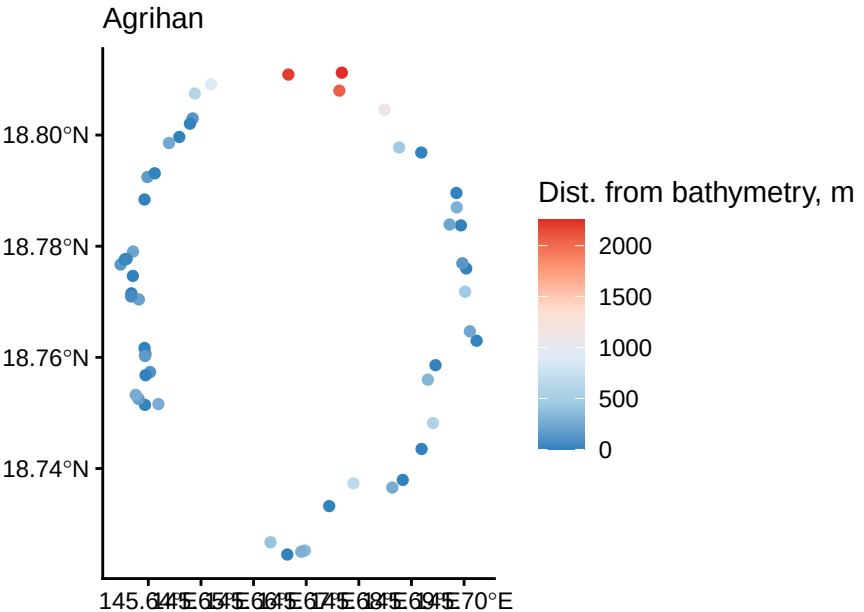
Agrihan
18.80°N
18.78°N
18.76°N
18.74°N
145.6°E
Dist. from bathymetry, m
2000
1500
1000
500
0

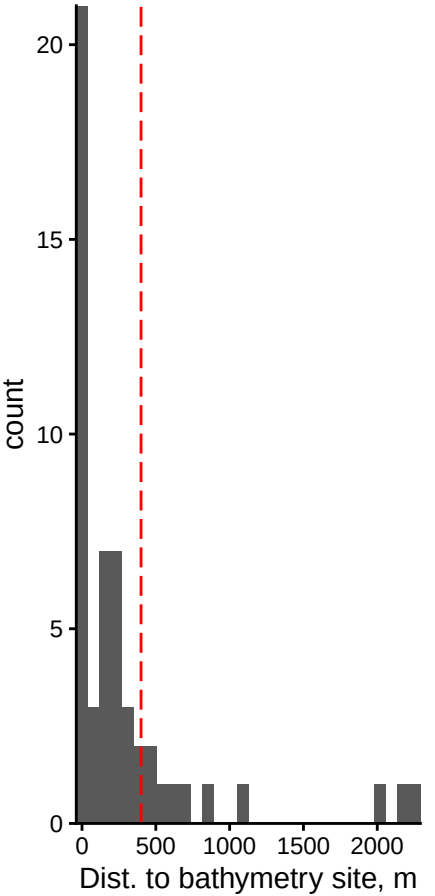
count
20
15
10
5
0
0
500
1000
1500
2000
Dist. to bathymetry site, m

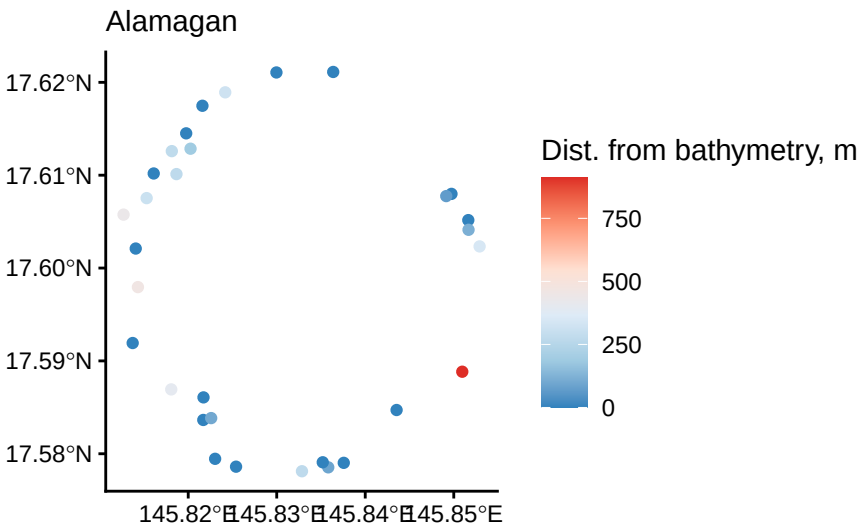
Alamagan
17.62°N
17.61°N
17.60°N
17.59°N
17.58°N
145.82°E
145.83°E
145.84°E
145.85°E
Dist. from bathymetry, m
750
500
250
0

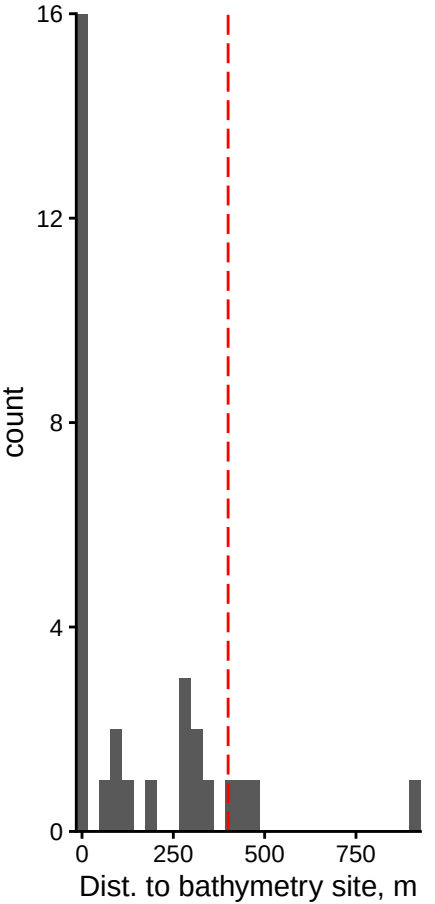
16
12
8
4
0
count
0
250
500
750
Dist. to bathymetry site, m

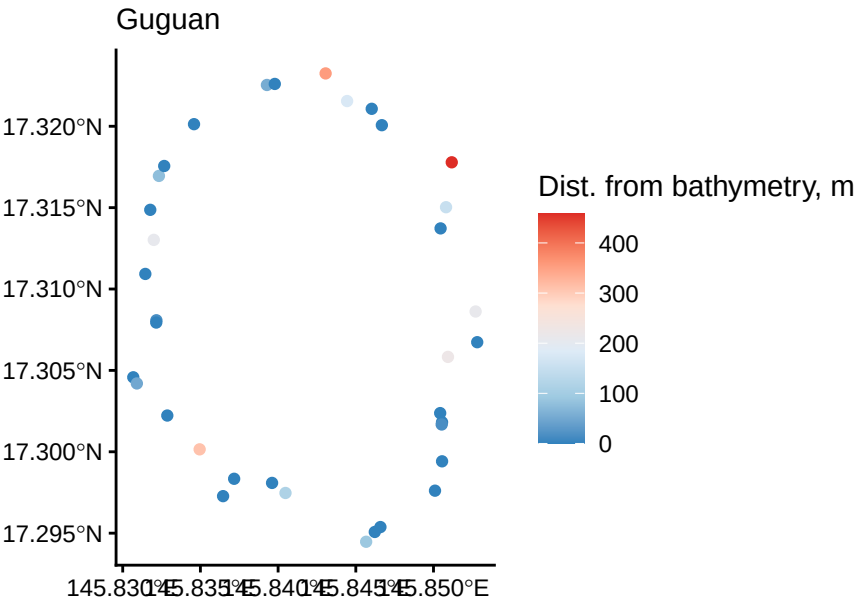
Guguan
17.320°N
17.315°N
17.310°N
17.305°N
17.300°N
17.295°N
145.830°E
145.835°E
145.840°E
145.845°E
145.850°E
Dist. from bathymetry, m
400
300
200
100
0

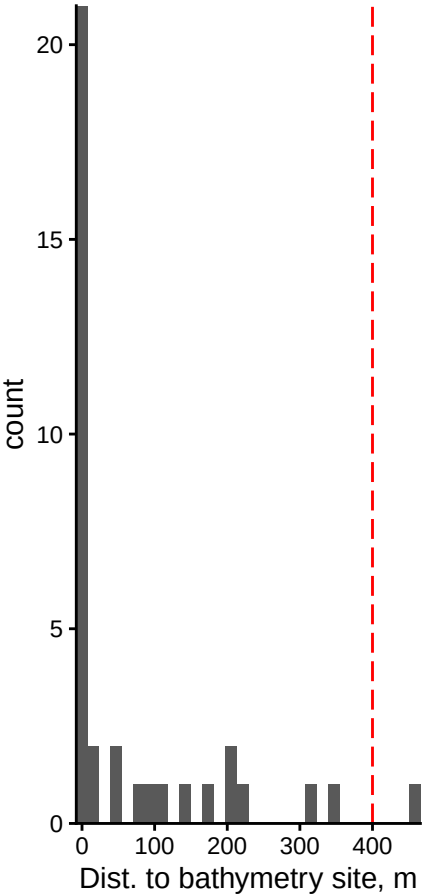
count
20
15
10
5
0
0
100
200
300
400
Dist. to bathymetry site, m

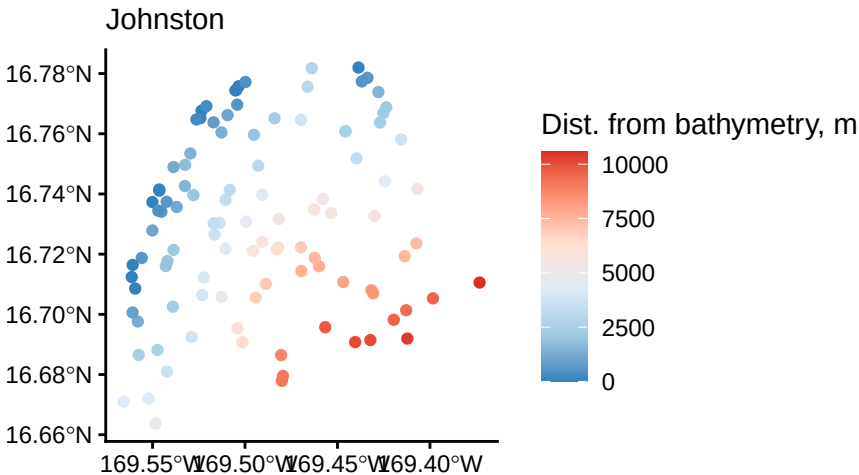
Johnston
16.78°N
16.76°N
16.74°N
16.72°N
16.70°N
16.68°N
16.66°N
169.55°W
169.50°W
169.45°W
169.40°W
Dist. from bathymetry, m
10000
7500
5000
2500
0

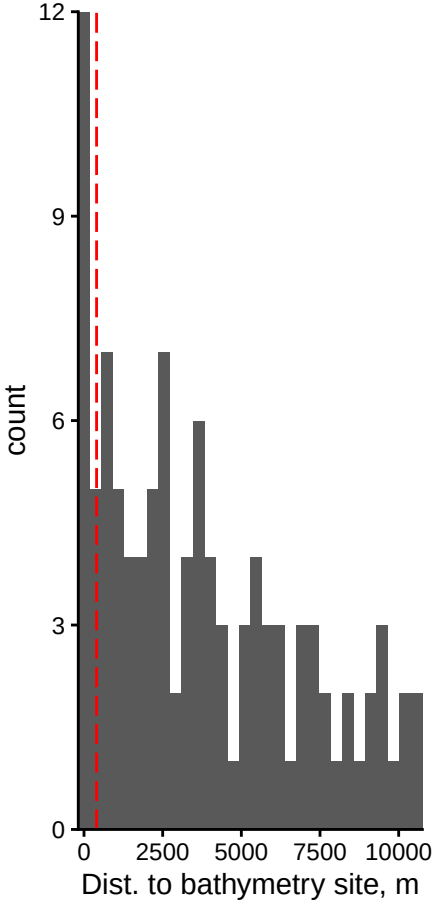
12
9
6
3
0
count
0
2500
5000
7500
10000
Dist. to bathymetry site, m

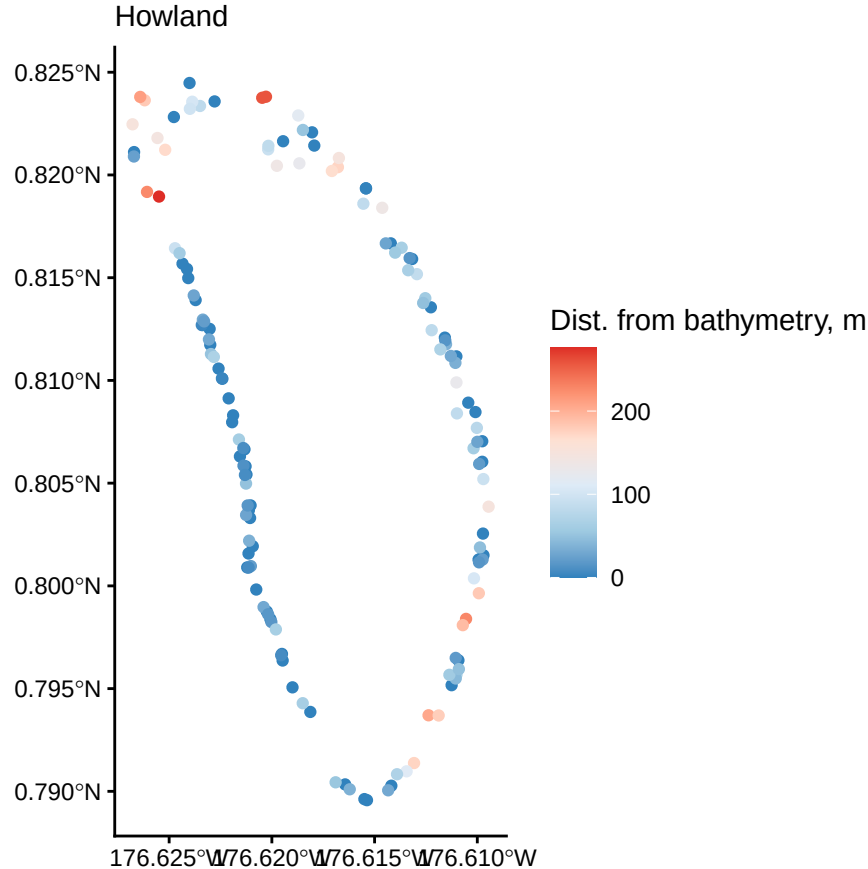
Howland
0.825°N
0.820°N
0.815°N
0.810°N
0.805°N
0.800°N
0.795°N
0.790°N
176.625°W
176.620°W
176.615°W
176.610°W
Dist. from bathymetry, m
200
100
0

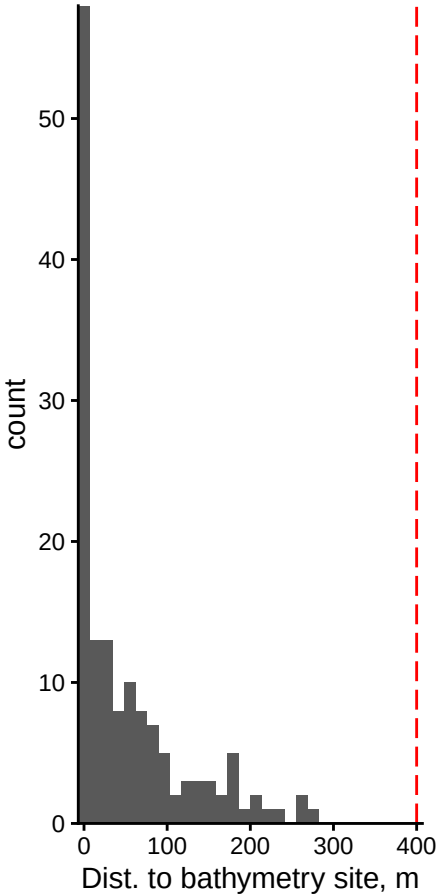
count
50
40
30
20
10
0
0
100
200
300
400
Dist. to bathymetry site, m

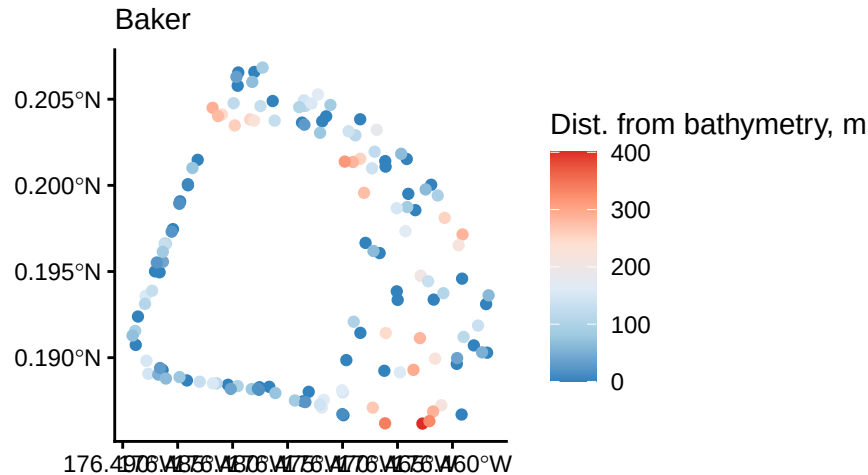
Baker
0.205°N
0.200°N
0.195°N
0.190°N
176.490°W
176.485°W
176.480°W
176.475°W
176.470°W
176.465°W
176.460°W
Dist. from bathymetry, m
400
300
200
100
0

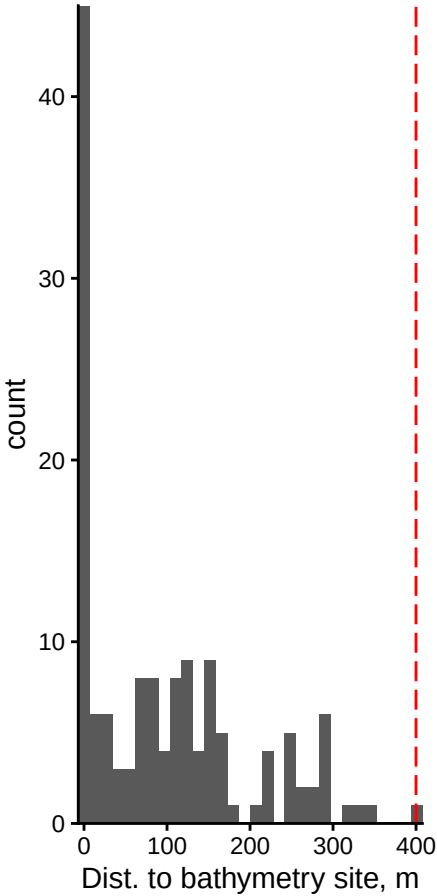
count
0
10
20
30
40
0
100
200
300
400
Dist. to bathymetry site, m

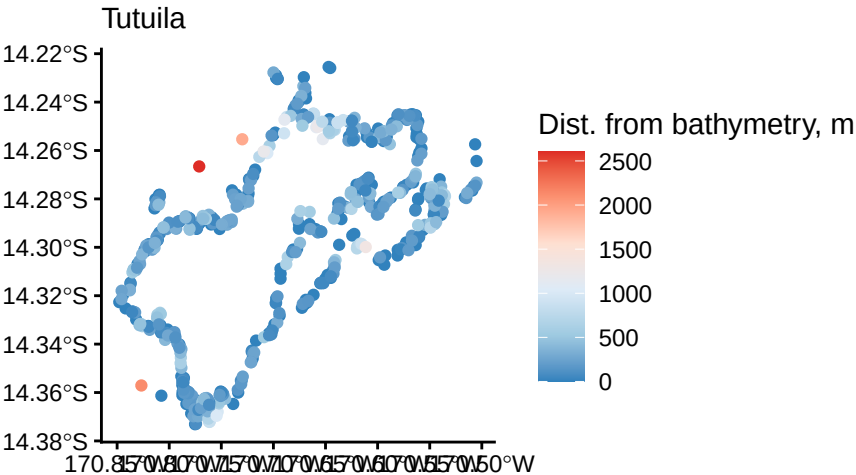
Tutuila
14.22°S
14.24°S
14.26°S
14.28°S
14.30°S
14.32°S
14.34°S
14.36°S
14.38°S
170.85°W
170.80°W
170.75°W
170.70°W
170.65°W
170.60°W
170.55°W
170.50°W
Dist. from bathymetry, m
2500
2000
1500
1000
500
0

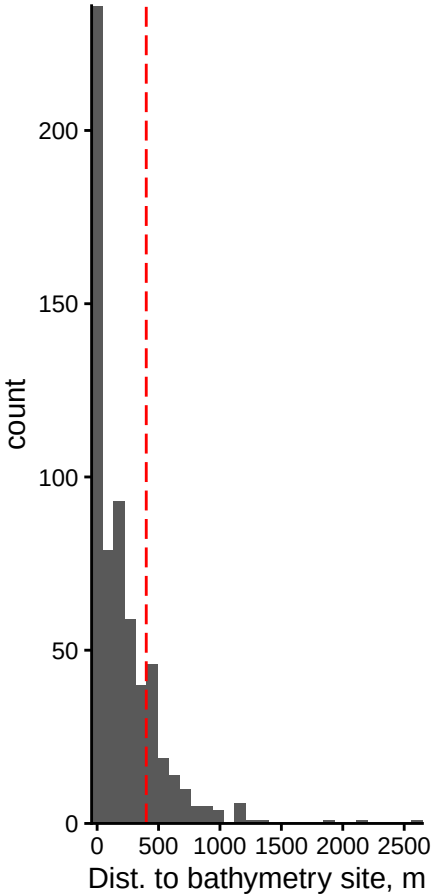
count
200
150
100
50
0
0
500
1000
1500
2000
2500
Dist. to bathymetry site, m

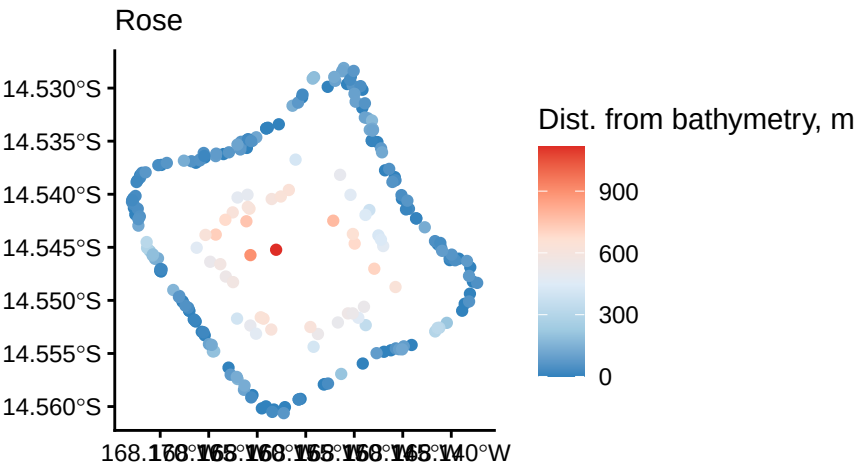
Rose
14.530°S
14.535°S
14.540°S
14.545°S
14.550°S
14.555°S
14.560°S
168.140°W
Dist. from bathymetry, m
900
600
300
0

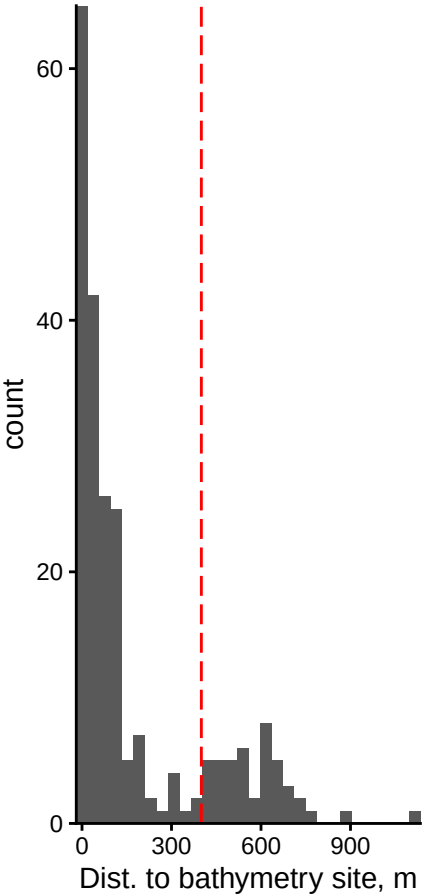
count
60
40
20
0
0
300
600
900
Dist. to bathymetry site, m

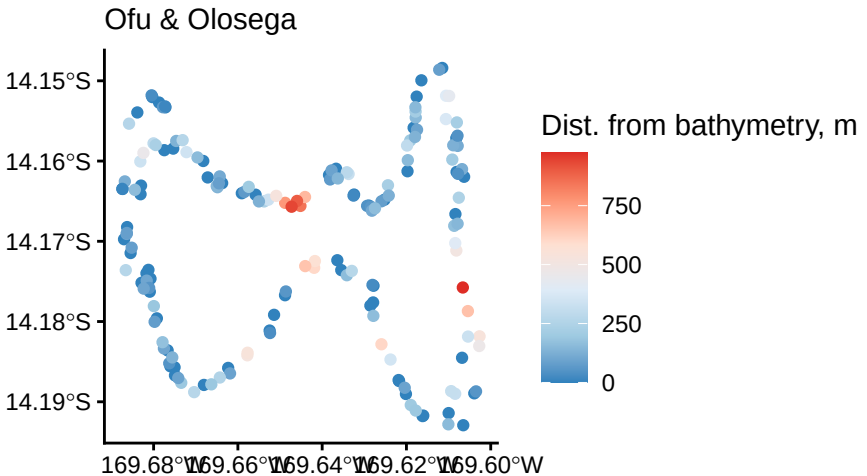
Ofu & Olosega
14.15°S
14.16°S
14.17°S
14.18°S
14.19°S
169.68°W
169.66°W
169.64°W
169.62°W
169.60°W
Dist. from bathymetry, m
750
500
250
0

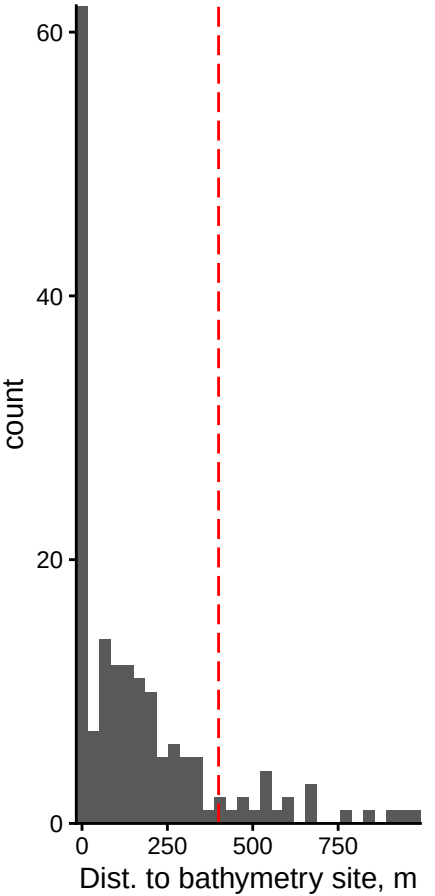
60
40
20
0
count
0
250
500
750
Dist. to bathymetry site, m

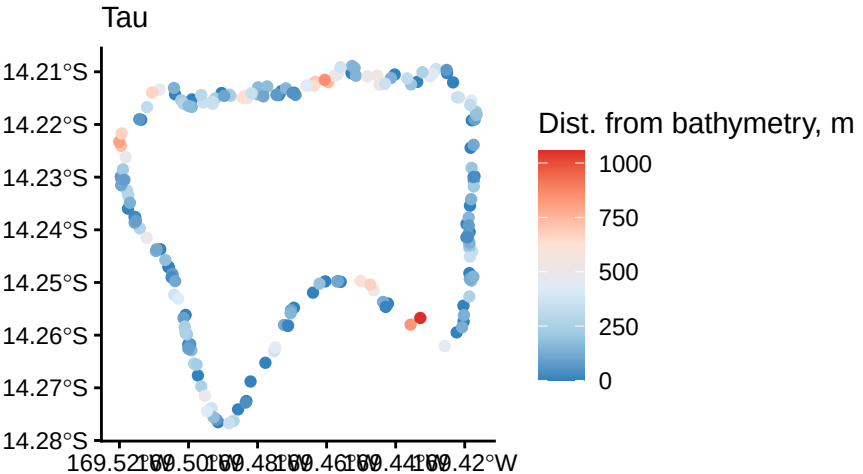
Tau
14.21°S
14.22°S
14.23°S
14.24°S
14.25°S
14.26°S
14.27°S
14.28°S
169.52°W
169.50°W
169.48°W
169.46°W
169.44°W
169.42°W
Dist. from bathymetry, m
1000
750
500
250
0

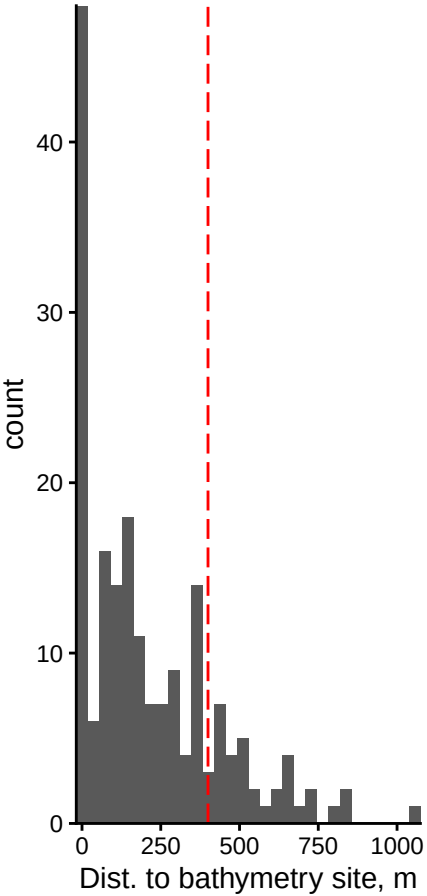
count
0
10
20
30
40
0
250
500
750
1000
Dist. to bathymetry site, m

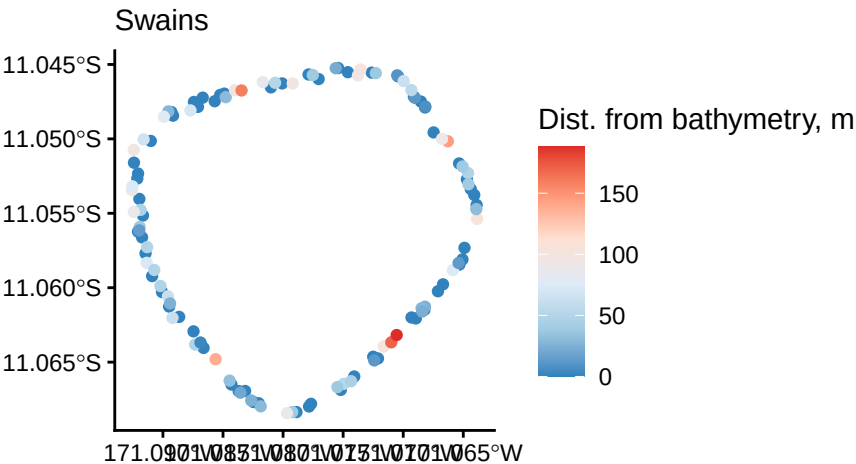
Swains
11.045°S
11.050°S
11.055°S
11.060°S
11.065°S
171.09°W
171.085°W
171.08°W
171.075°W
171.07°W
171.065°W
Dist. from bathymetry, m
150
100
50
0

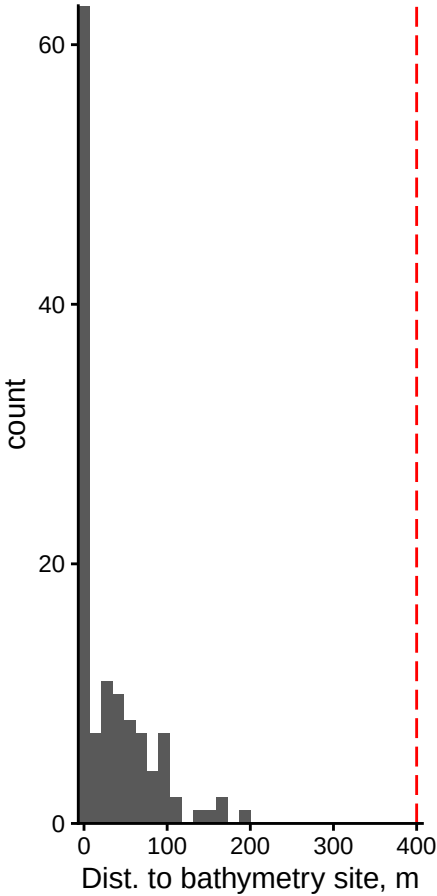
count
60
40
20
0
0
100
200
300
400
Dist. to bathymetry site, m

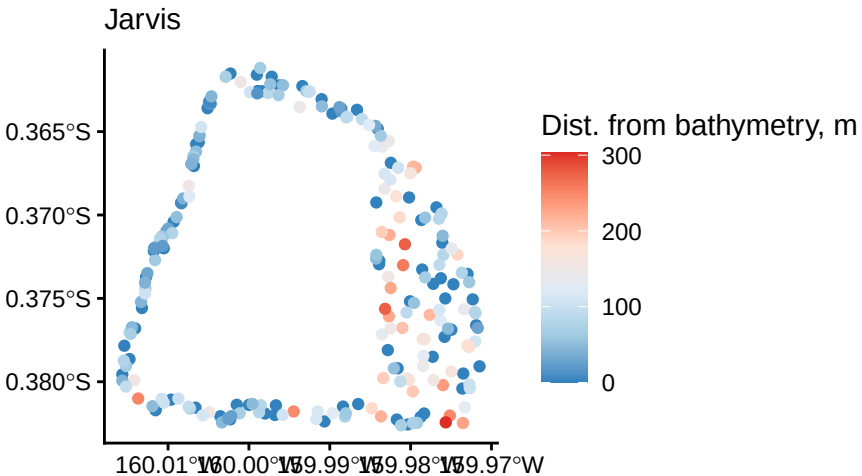
Jarvis
0.365°S
0.370°S
0.375°S
0.380°S
160.01°W
160.00°W
159.99°W
159.98°W
159.97°W
Dist. from bathymetry, m
300
200
100
0

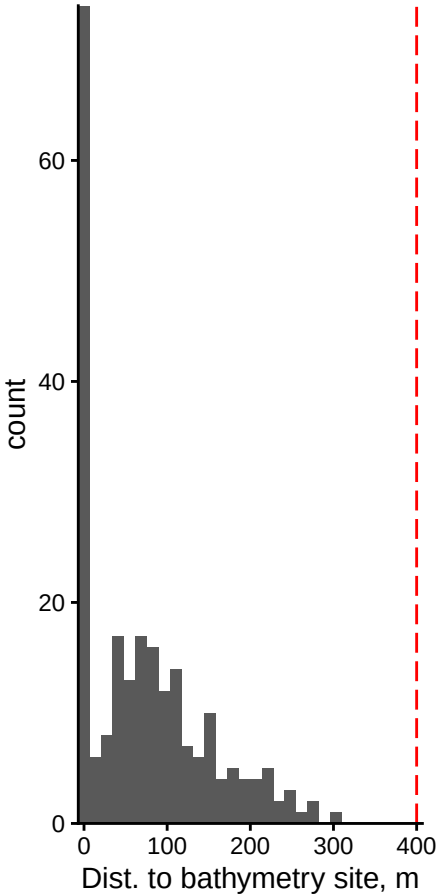
count
0
20
40
60
0
100
200
300
400
Dist. to bathymetry site, m

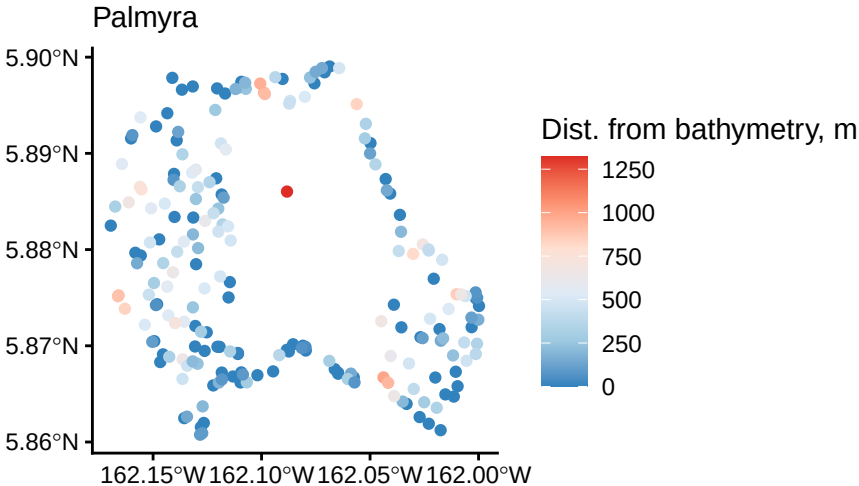
Palmyra
5.90°N
5.89°N
5.88°N
5.87°N
5.86°N
162.15°W
162.10°W
162.05°W
162.00°W
Dist. from bathymetry, m
1250
1000
750
500
250
0

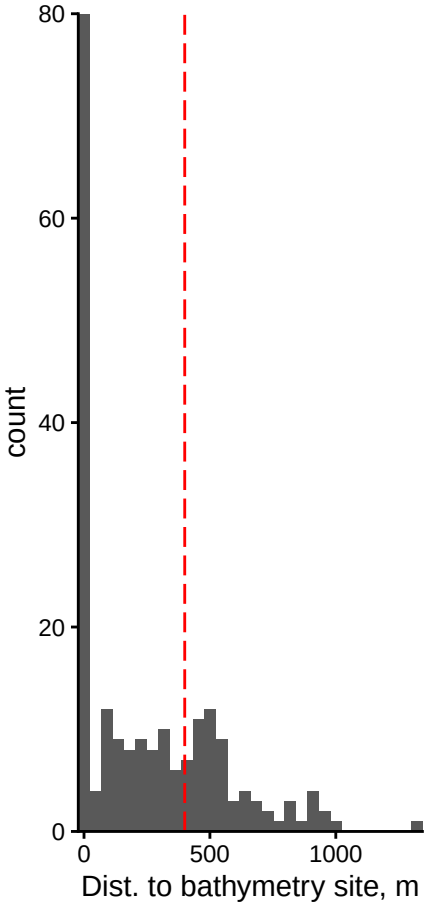
80
60
40
20
0
count
0
500
1000
Dist. to bathymetry site, m

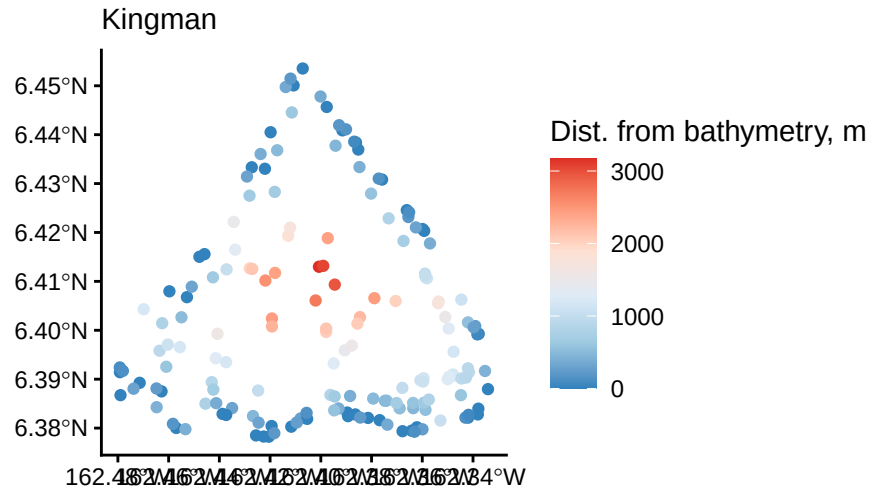
Kingman
6.45°N
6.44°N
6.43°N
6.42°N
6.41°N
6.40°N
6.39°N
6.38°N
Dist. from bathymetry, m
3000
2000
1000
0

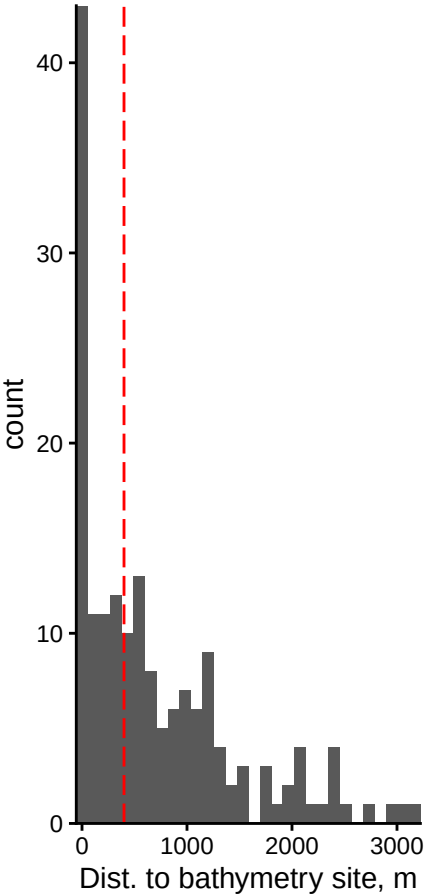
count
40
30
20
10
0
0
1000
2000
3000
Dist. to bathymetry site, m

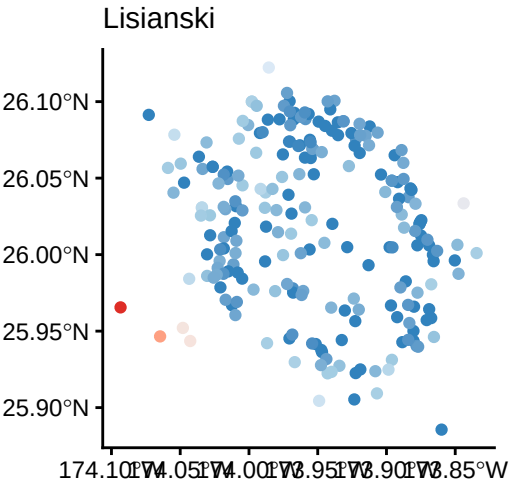
Lisianski
26.10°N
26.05°N
26.00°N
25.95°N
25.90°N
174.10°W
174.05°W
174.00°W
173.95°W
173.90°W
173.85°W

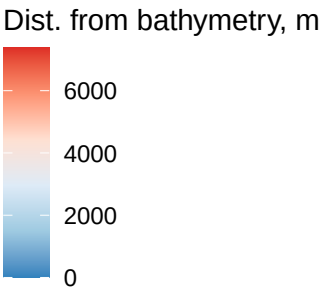
Dist. from bathymetry, m
6000
4000
2000
0

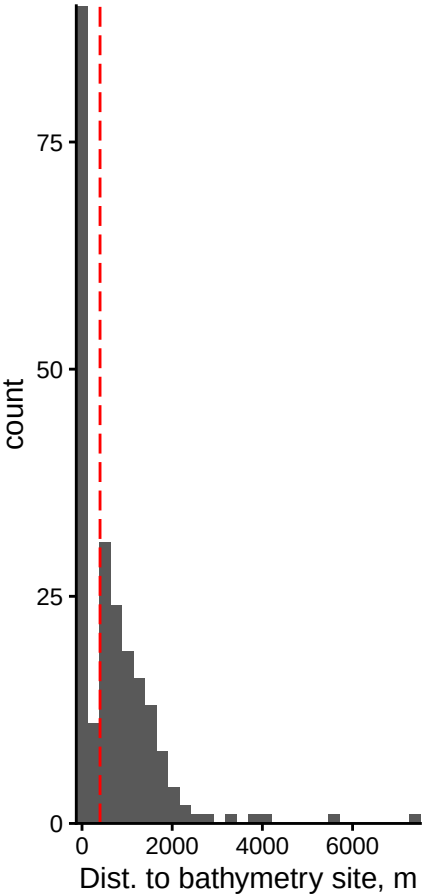
count
75
50
25
0
0
2000
4000
6000
Dist. to bathymetry site, m

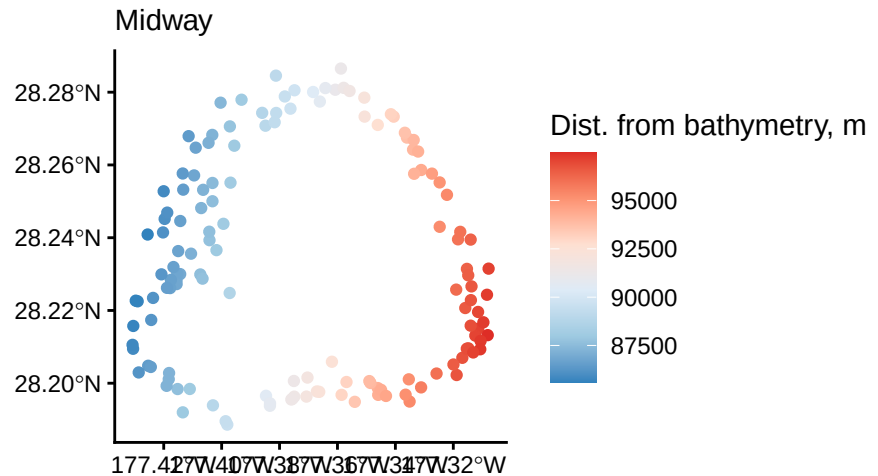
Midway
28.28°N
28.26°N
28.24°N
28.22°N
28.20°N
177.42°W
177.40°W
177.38°W
177.36°W
177.34°W
177.32°W
Dist. from bathymetry, m
95000
92500
90000
87500

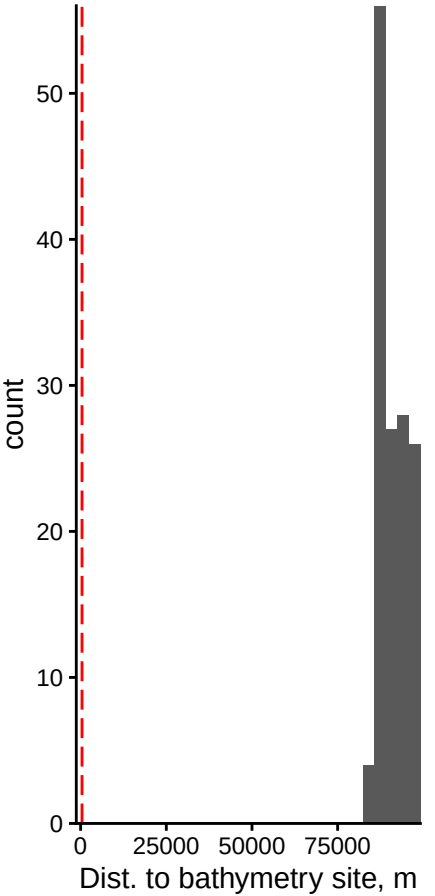
count
0
10
20
30
40
50
0
25000
50000
75000
Dist. to bathymetry site, m

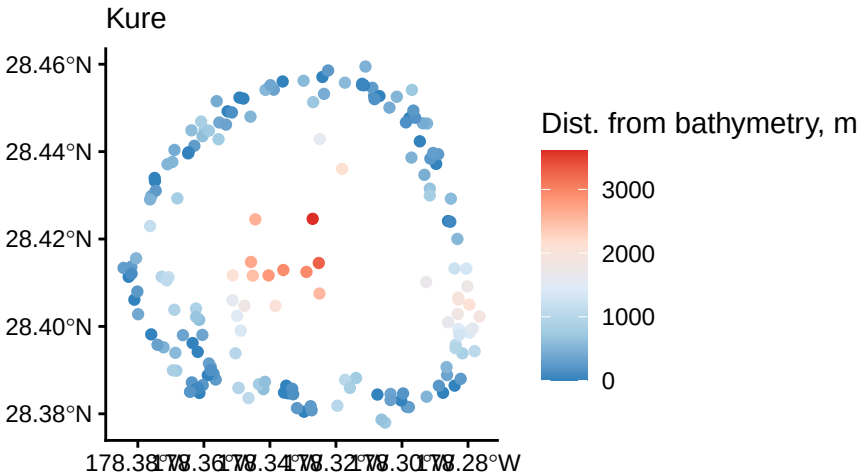
Kure
28.46°N
28.44°N
28.42°N
28.40°N
28.38°N
178.38°W
178.36°W
178.34°W
178.32°W
178.30°W
178.28°W
Dist. from bathymetry, m
3000
2000
1000
0

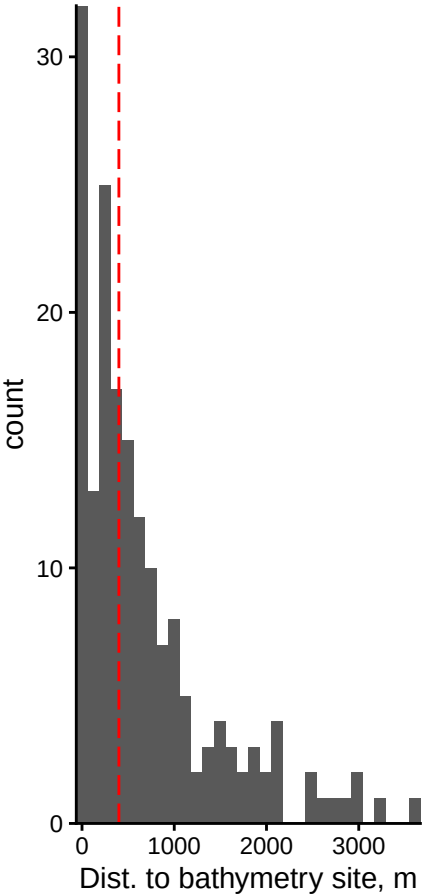
count
30
20
10
0
0
1000
2000
3000
Dist. to bathymetry site, m

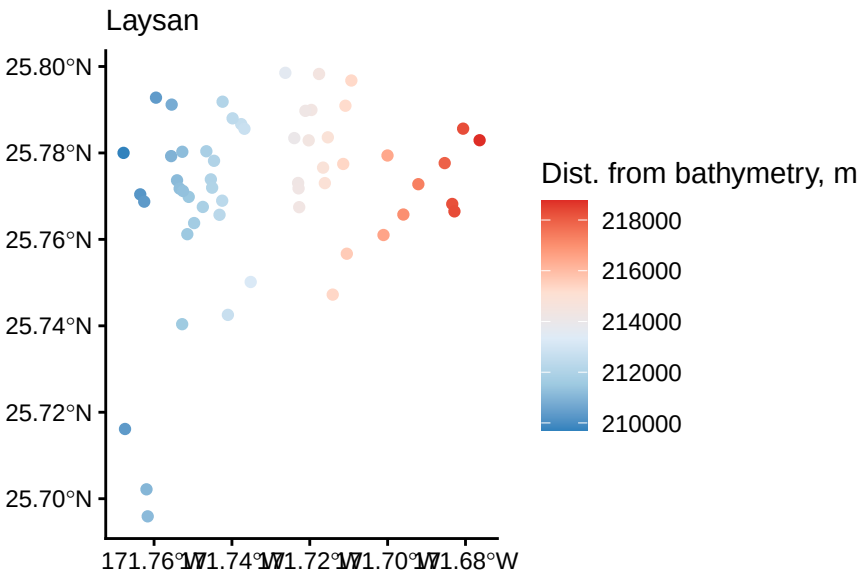
Laysan
25.80°N
25.78°N
25.76°N
25.74°N
25.72°N
25.70°N
171.76°W
171.74°W
171.72°W
171.70°W
171.68°W
Dist. from bathymetry, m
218000
216000
214000
212000
210000

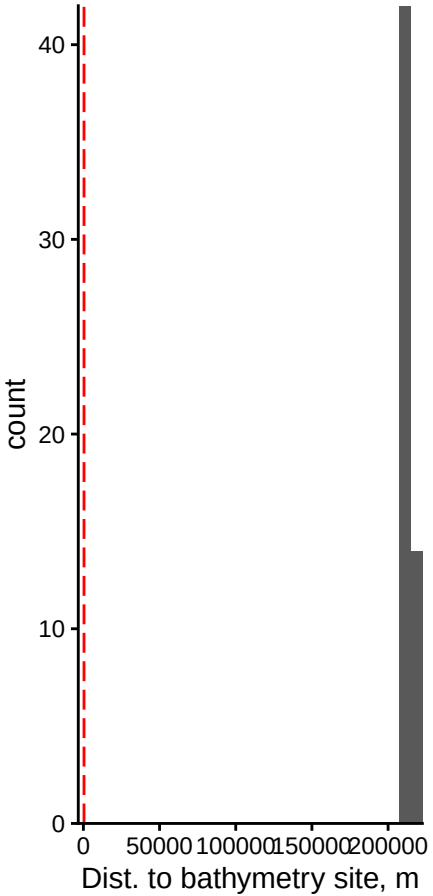
count
40
30
20
10
0
0
50000
100000
150000
200000
Dist. to bathymetry site, m

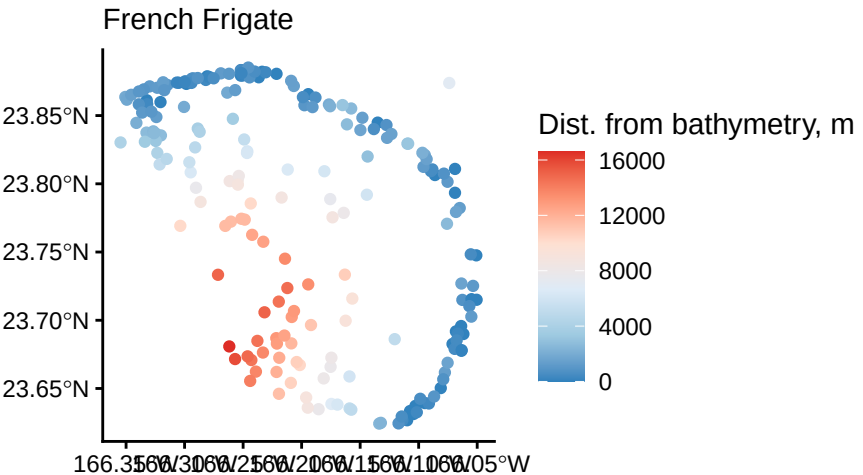
French Frigate
23.85°N
23.80°N
23.75°N
23.70°N
23.65°N
166.35°W
166.30°W
166.25°W
166.20°W
166.15°W
166.10°W
166.05°W
Dist. from bathymetry, m
16000
12000
8000
4000
0

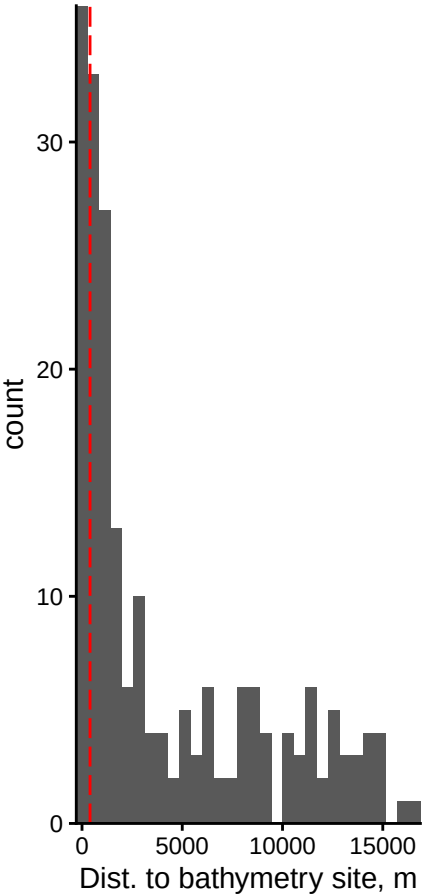
count
0
10
20
30
0
5000
10000
15000
Dist. to bathymetry site, m

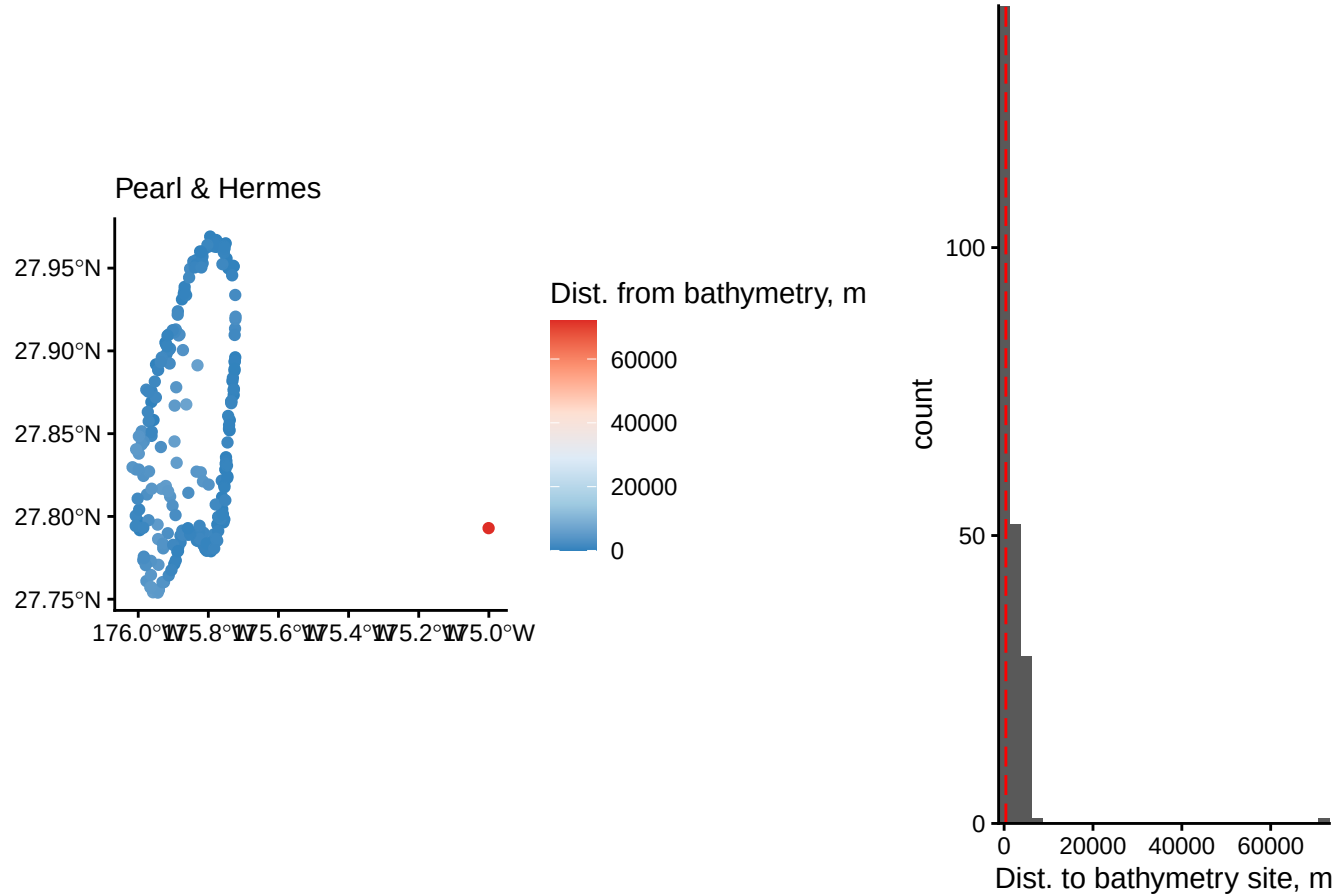
Pearl & Hermes
27.95°N
27.90°N
27.85°N
27.80°N
27.75°N
176.0°W
175.8°W
175.6°W
175.4°W
175.2°W
175.0°W
Dist. from bathymetry, m
60000
40000
20000
0
count
100
50
0
0
20000
40000
60000
Dist. to bathymetry site, m

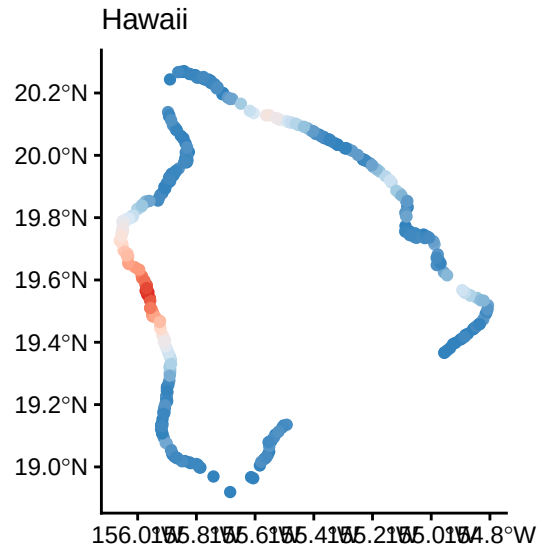
Hawaii
20.2°N
20.0°N
19.8°N
19.6°N
19.4°N
19.2°N
19.0°N
156.0°W
155.8°W
155.6°W
155.4°W
155.2°W
155.0°W
154.8°W

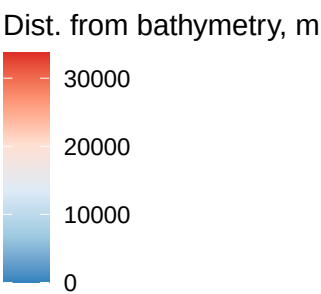
Dist. from bathymetry, m
30000
20000
10000
0

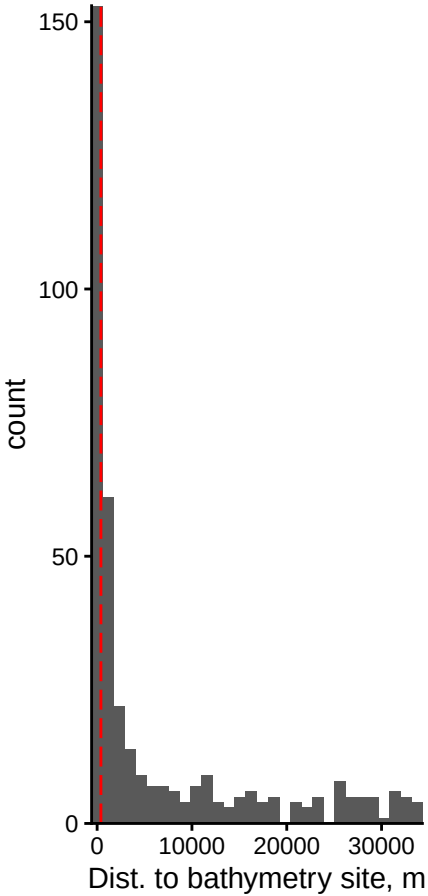
150
100
50
0
count
0
10000
20000
30000
Dist. to bathymetry site, m

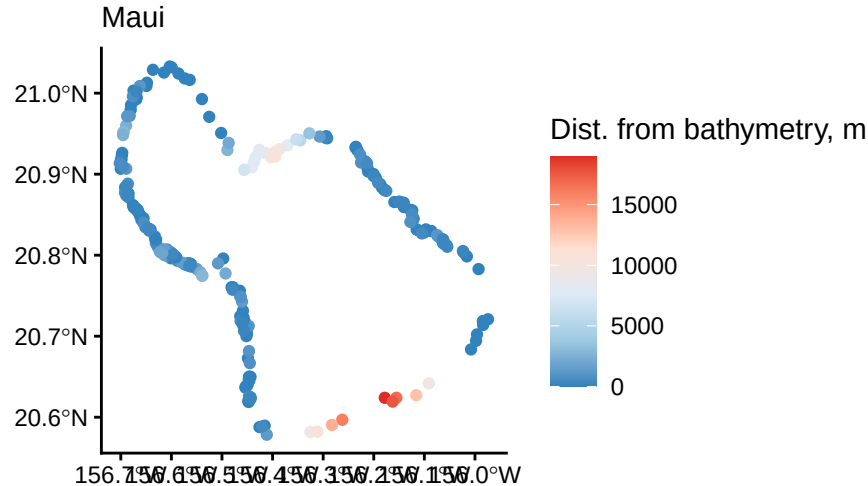
Maui
21.0°N
20.9°N
20.8°N
20.7°N
20.6°N
156.7°W
156.6°W
156.5°W
156.4°W
156.3°W
156.2°W
156.1°W
156.0°W
Dist. from bathymetry, m
15000
10000
5000
0

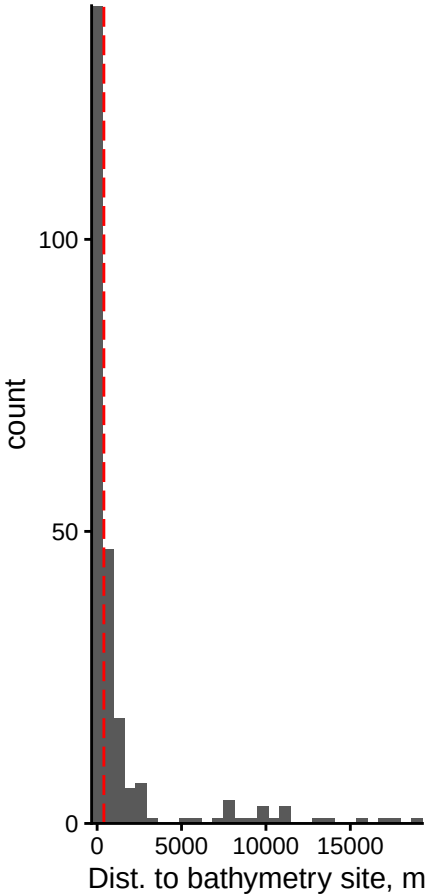
count
100
50
0
0
5000
10000
15000
Dist. to bathymetry site, m

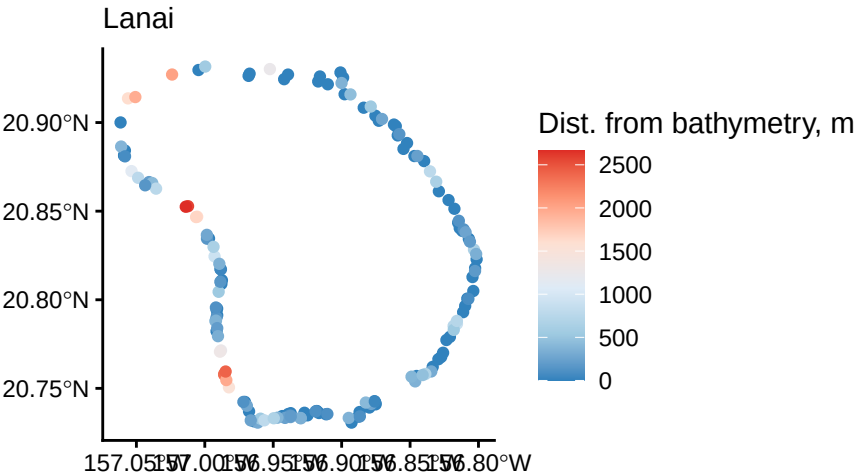
Lanai
20.90°N
20.85°N
20.80°N
20.75°N
157.05°W
157.00°W
156.95°W
156.90°W
156.85°W
156.80°W
Dist. from bathymetry, m
2500
2000
1500
1000
500
0

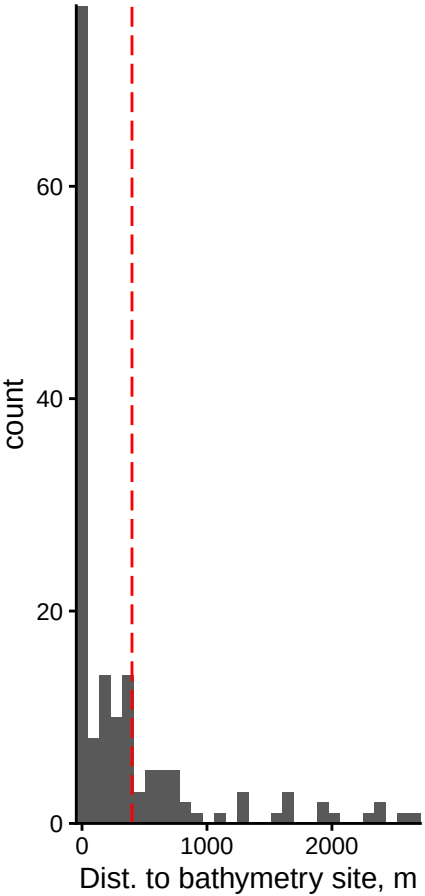
count
60
40
20
0
0
1000
2000
Dist. to bathymetry site, m

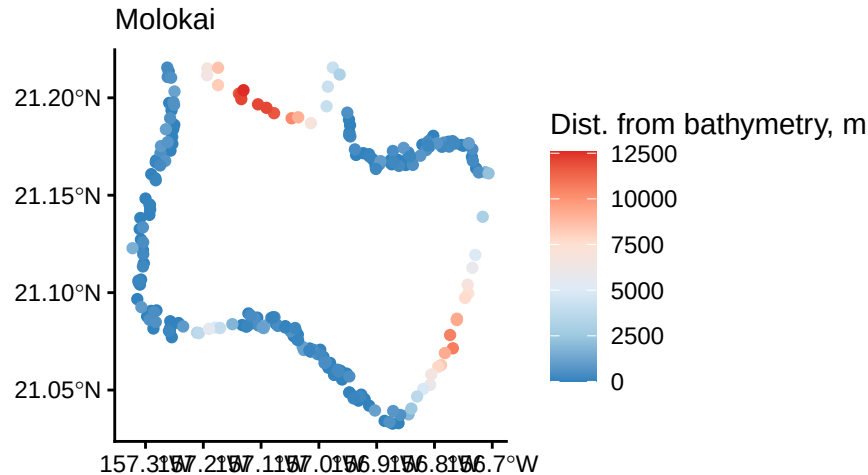
Molokai
21.20°N
21.15°N
21.10°N
21.05°N
157.3°W
157.2°W
157.1°W
157.0°W
156.9°W
156.8°W
156.7°W
Dist. from bathymetry, m
12500
10000
7500
5000
2500
0

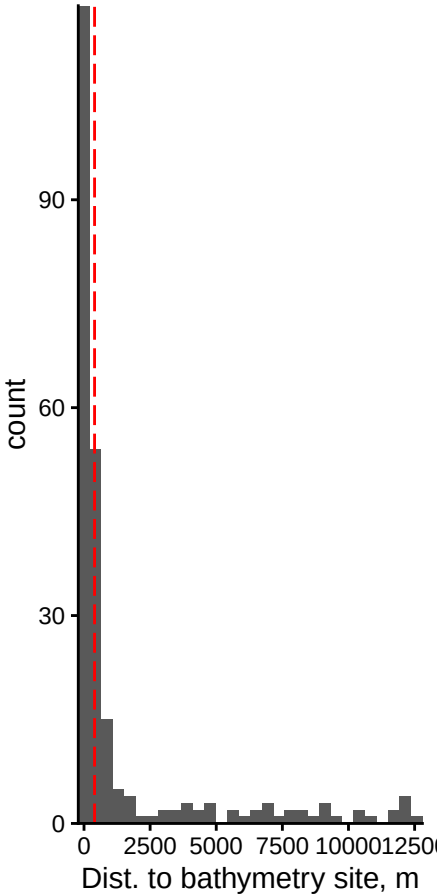
count
90
60
30
0
0
2500
5000
7500
10000
12500
Dist. to bathymetry site, m

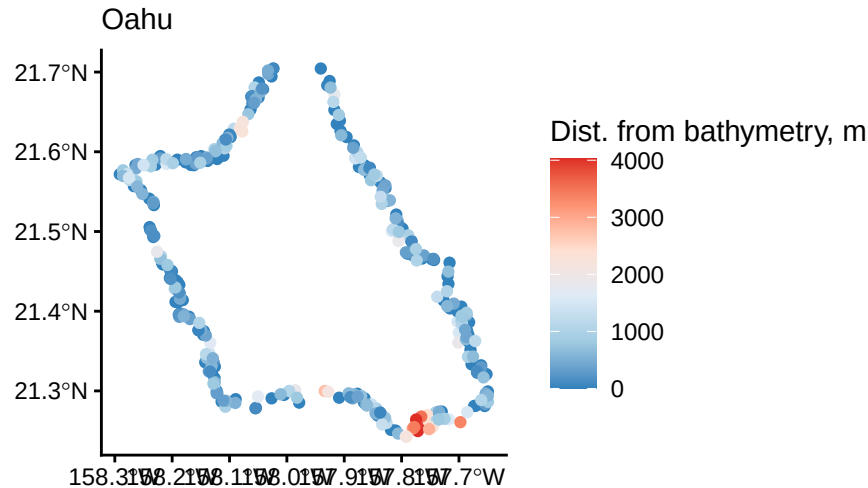
Oahu
21.7°N
21.6°N
21.5°N
21.4°N
21.3°N
158.3°W
158.2°W
158.1°W
158.0°W
157.9°W
157.8°W
157.7°W
Dist. from bathymetry, m
4000
3000
2000
1000
0

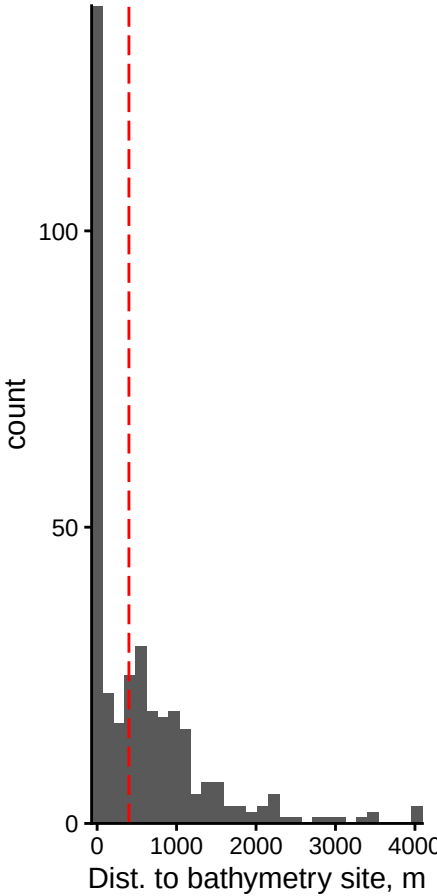
count
100
50
0
0
1000
2000
3000
4000
Dist. to bathymetry site, m

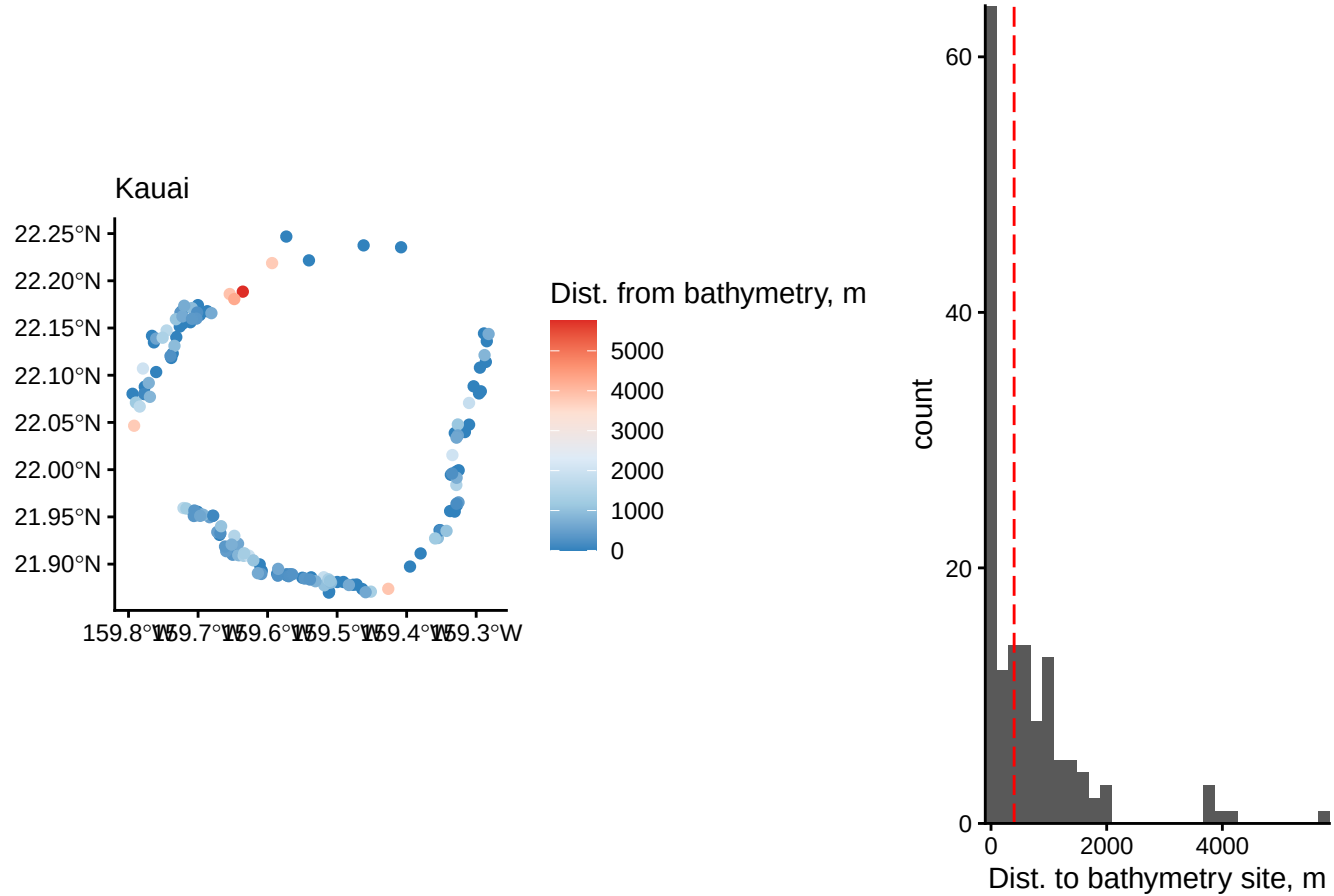
Kauai
22.25°N
22.20°N
22.15°N
22.10°N
22.05°N
22.00°N
21.95°N
21.90°N
159.8°W
159.7°W
159.6°W
159.5°W
159.4°W
159.3°W
Dist. from bathymetry, m
5000
4000
3000
2000
1000
0
count
60
40
20
0
0
2000
4000
Dist. to bathymetry site, m

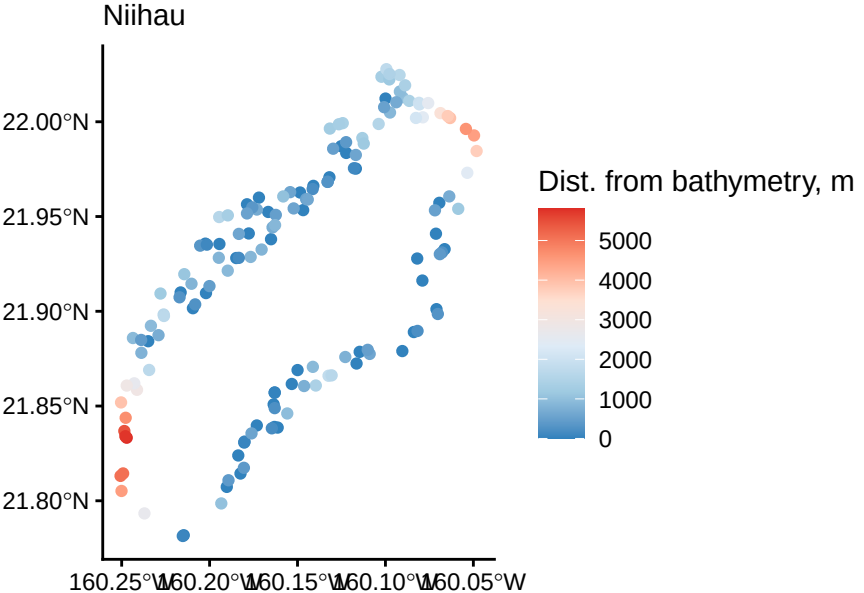
Niihau
22.00°N
21.95°N
21.90°N
21.85°N
21.80°N
160.25°W
160.20°W
160.15°W
160.10°W
160.05°W
Dist. from bathymetry, m
5000
4000
3000
2000
1000
0

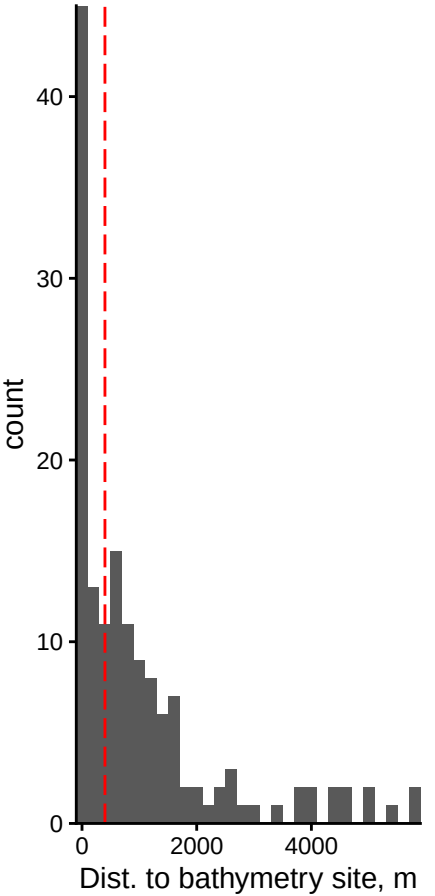
count
40
30
20
10
0
0
2000
4000
Dist. to bathymetry site, m

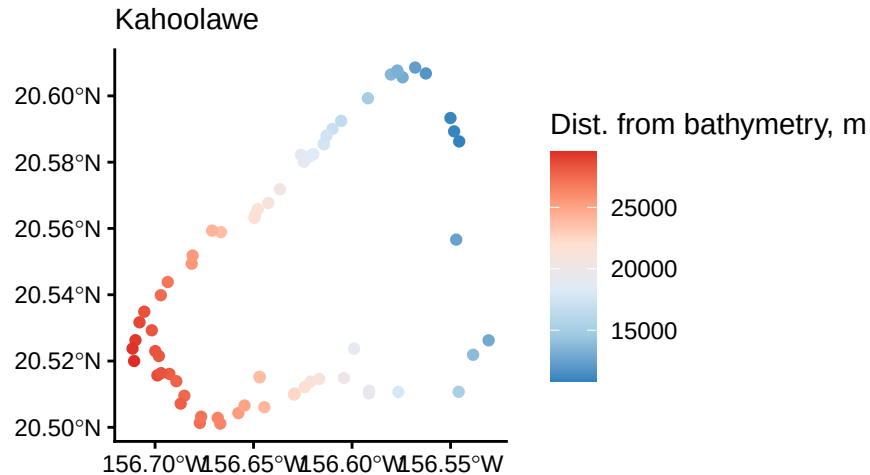
Kahoolawe
20.60°N
20.58°N
20.56°N
20.54°N
20.52°N
20.50°N
156.70°W
156.65°W
156.60°W
156.55°W
Dist. from bathymetry, m
25000
20000
15000

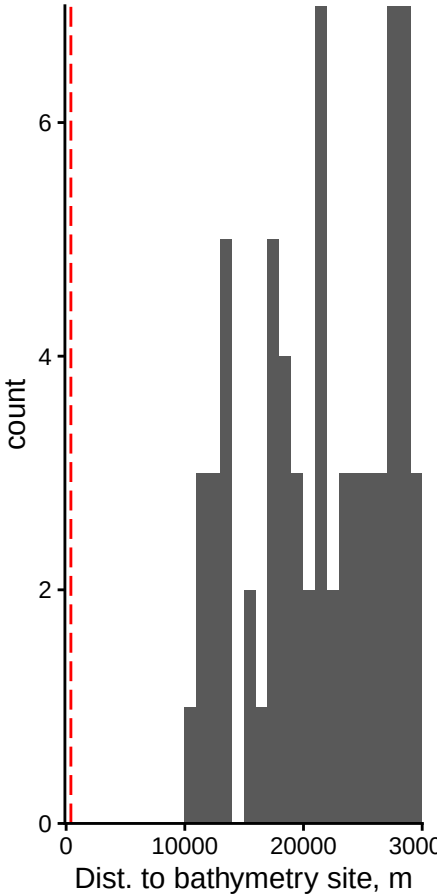
count
0
2
4
6
0
10000
20000
3000
Dist. to bathymetry site, m